Skip to content

- Post category:Class 7 MCQs

Notesstreet offers a comprehensive set of MCQs for **Class 7 Social Science Our Past MCQs** Chapter – 6, which covers the topic of the Towns, Traders and Craftpersons. The MCQs are prepared to help students test their knowledge and understanding of the topic in a fun and interactive way and also it help for exams. The Class 7 Social Science Our Past MCQs Chapter – 6 cover various aspects of the Rulers and Buildings. By practicing these MCQs, students can gain a better understanding of the Rulers and Buildings and its impact on Indian history. With Notesstreet.in's Class 7 Social Science Our Past MCQs Chapter – 6, students can enhance their learning and prepare effectively for their exams. For more notes **click**

Class 7 Social Science Our Past MCQs Chapter – 6 Towns, Traders and Craftpersons

1. The Rajarajeshvara temple was constructed in

(A) Ajmer

(B) Bijapur

(C) Vijayanagara

(D) Thanjavur

Ans. (D)

2. Bronze is an alloy containing

(A) Copper and zinc

(B) Copper and tin

(C) Gold and tin

(D) Zinc and tin

Ans. (B)

3. Which of the following was a pilgrim centre?

(A) Bombay

(B) Calcutta

(C) Surat

(D) Pushkar

Ans. (D)

4. From Africa traders brought

(A) gold and silver

(B) blue pottery and silver

(C) gold and ivory

(D) blue pottery and ivory

Ans. (C)

5. What was Mandapika?

(A) Mandap

(B) Mandi

(C) Mandal

(D) None of these

Ans. (B)

6. Madras is present day

(A) Kerala

(B) Chennai

(C) Maharashtra

(D) Madurai

Ans. (B)

7. Which of the following was I were NOT the kind of traders?

(A) The Banjaras

(B) The Marwari Oswal

(C) Nenadesi

(D) Gujarati Baniyas

Ans. (C)

8. Associations or unions of persons of any particular craft was (were) termed as

(A) emporium

(B) factor

(C) guilds

(D) sthapatis

Ans. (C)

9. Who emerged as the most successful commercial and political power in the subcontinent

(A) Dutch

(B) French

(C) Portuguese

(D) English

Ans. (D)

10. Hampi was the capital of which Empire of the following?

(A) Vijayanagara

(B) Mughal

(C) Mewar

(D) None of these

Ans. (A)

11. Sthapati were called

(A) Sculptures

(B) Soldiers

(C) Weavers

(D) Farmers

Ans. (A)

12. The people from distant land visited Surat because

(A) it was the Gateway to West Asia

(B) it was a beautiful place

(C) it was the pilgrim centre

(D) none of the above

Ans. (A)

13. Whose bronze statues were made using the lost wax technique

(A) Mughals

(B) Chola

(C) Cheras

(D) Pallavas

Ans. (B)

14. Important trade centre from western India was

(A) Masulipatnam

(B) Hampi

(C) Surat

(D) Madurai

Ans. (C)

15. Fish port town is called

(A) Masolipatnam

(B) Masulipatnom

(C) Masulipatnam

(D) Masulipatnem

Ans. (C)

16. Masulipatnam was famous for its

(A) elephant trade

(B) temples

(C) crafts production of copper and silver

(D) trading port

Ans. (D)

17. Zari is

(A) Silver lace border

(B) Golden Ivory

(C) Gold lace border

(D) Golden colour Shawl

Ans. (C)

18. The part of the town where artisans and merchants of Indian origin used to live was called

(A) administrative town

(B) port town

(C) commercial town

(D) black town

Ans. (D)

19. Qutb Shahi rulers of

(A) Bijapur

(B) Bidar

(C) Golconda

(D) Hampi

Ans. (C)

20. How was water supplied to the city of Thanjavur?

(A) Wells

(B) Tanks

(C) Both a and b

(D) None of these

Ans. (C)

21. What type of towns existed during the Medieval period?

(A) Port

(B) Administrative

(C) Temple

(D) All of these

Ans. (D)

22. Kabul is in present day

(A) Iraq

(B) Pakistan

(C) China

(D) Afghanistan

Ans. (D)

23. The fort at Masulipatnam was built by whom?

(A) Dutch

(B) English

(C) French

(D) Portuguese

Ans. (A)

24. Thanjavur is situated on the river:

(A) Kaveri

(B) Krishna

(C) Mahanadi

(D) Godavari

Ans. (A)

25. Which of the following is not the Deccani sultan

(A) Kabul

(B) Bijapur

(C) Golconda

(D) Berar

Ans. (A)

26. Kabul and Qandahar were linked to which route?

(A) Silk Route

(B) Cape Route

(C) Suez Canal Route

(D) Cotton Route

Ans. (A)

27. Which of the following was also an example of a temple town (The capital of Cholas)?

(A) Ajmer

(B) Thanjavur

(C) Berar

(D) Golconda

Ans. (B)

28. Which of the following was / were NOT the kind of traders?

(A) The Banjaras

(B) The Marwari Oswal

(C) Nenadesi

(D) Gujarati Baniyas

Ans. (C)

29. Which of the following is an example of a temple town?

(A) Ajmer

(B) Thanjavur

(C) Berar

(D) Delhi

Ans. (B)

30. When did Murshidabad become the capital of Bengal?

(A) 1703

(B) 1704

(C) 1709

(D) 1710

Ans. (B)

31. People in small town in come from far of places to sell their distant product except

(A) Salt

(B) Polybags

(C) Beetle Nuts

(D) Horse

Ans. (B)

32. Who among the following were linked to silk route?

(A) Kabul

(B) Qandahar

(C) Both a and b

(D) None of these

Ans. (C)

33. Which town was called the gate to Mecca?

(A) Surat

(B) Bombay

(C) Thanjavur

(D) Somnath

Ans. (A)

34. ____ were often central to the economy and society

(A) Temples

(B) House

(C) Filed

(D) Palace

Ans. (A)

35. What was the capital of Vijayanagara?

(A) Mughal

(B) Hampi

(C) Mewar

(D) None of these

Ans. (B)

36. .....contains copper and tin?

(A) Gold

(B) Silver

(C) Bronze

(D) None

Ans. (C)

37. English East India Company shifted its headquarters in 1668 to

(A) Bombay

(B) Gujarat

(C) Delhi

(D) Surat

Ans. (A)

38. Who lived in the 'Black towns' in cities such as Madras?

(A) Weavers

(B) Native traders

(C) Crafts person

(D) All of the above

Ans. (A)

39. Who was Mulla Abdul Gaffur?

(A) Trader

(B) Farmer

(C) Samant

(D) Goldsmith

Ans. (A)

40. What type of towns existed during Medieval period?

(A) Port

(B) Administrative

(C) Temple

(D) All of these

Ans. (D)

41. Mention some articles of trades on which temple authorities collected taxes?

(A) Sugar

(B) Dyes

(C) Cotton

(D) All of the above

Ans. (D)

42. What is Bidar?

(A) Art of baked earth

(B) A type of embroidery

(C) Art of cloth

(C) Inlay art on metal

Ans. (D)

43. Tanjavur is situated on the river:

(A) Kaveri

(B) Krishna

(C) Mahanadi

(D) Godavari

Ans. (A)

44. Why was Surat so famous?

(A) For their gold lace borders

(B) For temples

(C) For buildings

(D) None of these

Ans. (A)

45. The fort of Masulipatnam was built by whom?

(A) Dutch

(B) English

(C) French

(D) Portugese

Ans. (A)

46. Which of the following was also an example of a temple town (The capital ofCholas)?

(A) Ajmer

(B) Thanjavur

(C) Berar

(D) Golconda

Ans. (B)

47. Which route were Kabul and Kandahar linked to?

(A) Silk route

(B) Cape route

(C) Suez canal route

(D) Cotton route

Ans. (A)

Please Share This Share this content

- Opens in a new window



- Opens in a new window

- Opens in a new window

- Opens in a new window

- Opens in a new window

- Opens in a new window

- Opens in a new window

- Opens in a new window

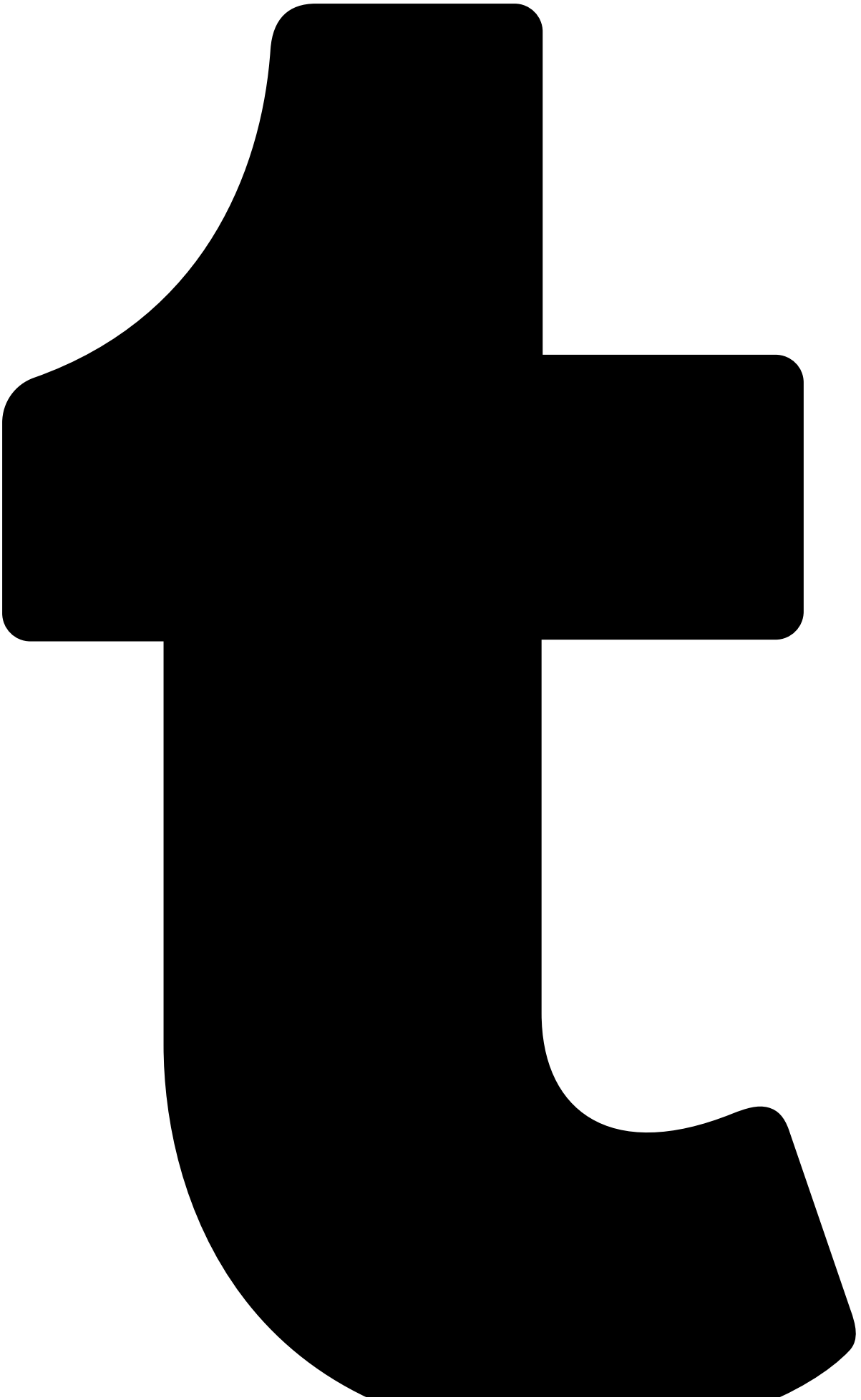

- Opens in a new window



- Opens in a new window

You Might Also Like

NCERT Class 7 Science MCQs Chapter – 5 Acids, Bases and Salts

July 5, 2022

Class 7 Social science History MCQs Chapter – 4 मुग़ल साम्राज्य

November 21, 2022

Class 7 Social science Our Past MCQs Chapter – 1.Tracing Changes Through a Thousand Years

February 20, 2023