Skip to content

- Post category:Uncategorized

Here we are providing Class 7 Social science Our Enviroment MCQs Chapter – 8 Human Environment Interactions the Tropical and the Subtropical Region because its very important for Class 7 students as we all know that every board exam question has MCQs so that students should practice these questions so that students can get good marks in board. **Class 7 Social science** Our Enviroment MCQs Chapter – 8 Human Environment Interactions the Tropical and the Subtropical Region is an extremely important and its also a year in which students learn the fundamentals of concepts that help them lay a solid foundation for their higher education. Here we are providing in Class 7 Social science Our Enviroment MCQs Chapter – 8 Human Environment Interactions the Tropical and the Subtropical Region 100+ questions so that students practice more and more. If you want class wise Notes Then **Click Here**

1. Which of the following city is not located along the river Ganga?

(a) Allahabad

(b) Kolkata

(c) Bengaluru

(d) sugarcane

Ans-(c)

2. Which of the following is not a cash crop?

(a) Jute

(b) jowar

(c) groundnut

(d) sugarcane

Ans-(b)

3. ____ are built on steep slopes to create flat surfaces on which crops are grown

(a) Land

(b) Plains

(c) Terraces

(d) Plateau

Ans-(c)

4. Buddhist Stupa is in

(a) Ranchi (Jharkhand)

(b) Raisen (Madhya Pradesh)

(c) Kanpur (Uttar Pradesh)

(d) Lucknow (Uttar Pradesh)

Ans-(b)

5. What are the common needs of all the people?

(a) Food

(b) Toys

(c) Camera

(d) All of these

Ans-(a)

6. The place where a river flows into another body of water is called

(a) Tributaries

(b) Meanders

(c) Delta

(d) River's mouth

Ans-(d)

7. The main river along with all its tributaries that drain an area forms a river

(a) River mouth

(b) Basin

(c) Tributaries

(d) Delta

Ans-(b)

8. The Amazon Basin is the largest river basin in the

(a) America

(b) World

(c) Africa

(d) Australia

Ans-(b)

9. Which of the following is an important port on the river Hooghly?

(a) Surat

(b) Coimbatore

(c) Kolkata

(d) Australia

Ans-(c)

10. How is the climate of Amazon basin characterized?

(a) By cold and wet

(b) By hot and wet

(c) By dry or wet

(d) None of these

Ans-(b)

11. _____ is a way of cultivating land where farmers clear a piece of land by slashing or cutting down trees and bushes

(a) Cutting and Burn

(b) Slash and damage

(c) Cutting and destroying

(d) Slash and Burn

Ans-(d)

12. _____ is a way of cultivating land where farmers clear a piece of land by slashing or cutting down trees and bushes

(a) Cutting and Burn

(b) Slash and damage

(c) Cutting and destroying

(d) Slash and Burn

Ans-(d)

13. The one-horned rhinoceros is found in the

(a) Brahmaputra plain

(b) Ganga plain

(c) Kaveri plain

(d) Krishna plain

Ans-(a)

14. Distinct tribal culture is found in the state:

(a) Arunachal Pradesh

(b) Assam

(c) Manipur

(d) Bihar

Ans-(a)

15. Slash and bum is:

(a) A way of rearing fish

(b) A way of cultivating land

(c) A way of rearing animals

(d) Bihar

Ans-(b)

16. Ganga-Brahmaputra basin form in

(a) Bhutan

(b) China

(c) India

(d) Sri Lanka

Ans-(c)

17. At night the temperature goes down in the Amazon basin but the humidity

(a) remains same

(b) remains low

(c) remains high

(d) none of these

Ans-(c)

18. The Ganga-Brahmaputra basin area is dominated by monsoon climate. The monsoon brings rains from

(a) mid-June to mid-July

(b) mid-June to mid-September

(c) mid-July to mid-August

(d) mid-July to mid-October

Ans-(b)

19. Coffee, maize and coca are:

(a) Cash crop

(b) Non-cash crops

(c) None

Ans-(a)

20. Considering kind of symbiosis, classification of parasites includes

(a) Endoparasites

(b) Ectoparasites

(c) Digestion parasites

(d) Both a and b

Ans-(d)

21. Which of the following is not a cash crop?

(a) Maize

(b) Cocoa

(c) Rice

Ans-(c)

22. The forests are in fact so thick that the dense ‘roof is created by

(a) cement

(b) concrete

(c) leaves

(d) stones

Ans-(c)

23. On Amazon basin

(a) Day and nights are almost equally cool and dry

(b) Day and nights are almost equally hot and humid

(c) Night are longer than day and are more hot and humid

(d) Day are longer than nights and are more cool and humid

Ans-(b)

24. Paddy is grown in the region where the amount of:

(a) Rainfall is high

(b) Rainfall is low

(c) Rainfall is very low

Ans-(a)

25. Silk is produced in parts of:

(a) Bihar and Punjab

(b) Bihar and Assam

(c) Delhi and Haryana

Ans-(b)

26. The Amazon Basin is in

(a) North Africa

(b) South America

(c) North America

(d) South Africa

Ans-(b)

27. The delta area is covered with the:

(a) Mangrove forests

(b) Deciduous forests

(c) Plantations

(d) South America

Ans-(a)

28. Toucans are the type of

(a) animals

(b) crops

(c) birds

(d) reptiles

Ans-(c)

29. In parts of Uttarakhand, Sikkim and Arunachal Pradesh the climate is:

(a) Hot and humid

(b) Cool

(c) Hot and wet

(d) reptiles

Ans-(b)

30. Manioc food belongs to the area of

(a) South America

(b) South Africa

(c) Amazon area

(d) Ganga basin

Ans-(a)

31. Catla are the variety of what?

(a) Snake

(b) Fish

(c) Sloth

(d) None of these

Ans-(b)

32. Where is one horned rhinoceros found?

(a) Brahmaputra plain

(b) Amazon basin

(c) Ghaghra plain

(d) None of these

Ans-(a)

33. What are the main occupation of the people living in the Ganga-Brahmaputra basin?

(a) Hunting

(b) Shop-keeping

(c) Agriculture

(d) None of these

Ans-(c)

34. What is the main occupation of the people living in Ganga-Brahmaputra basin?

(a) Fishing

(b) Lumbering

(c) Mining

(d) Agriculture

Ans-(d)

35. How is the climate of Amazon Basin?

(a) Hot and dry

(b) Cold and dry

(c) Hot and wet

(d) None of these

Ans-(c)

36. Where is Bengal Tiger found?

(a) Mountain area

(b) Amazon basin

(c) Sundarbans delta

(d) All of these

Ans-(c)

37. The place where a river flows into another body of water is called

(a) Tributaries

(b) Meanders

(c) Delta

(d) River's mouth

Ans-(d)

38. Kolkata is located on which river?

(a) Orange

(b) Hooghly

(c) Bhagirathi

(d) Yamuna

Ans-(b)

39. The Ganga-Brahmaputra basin area is dominated by monsoon climate. The monsoon brings rains from

(a) mid-June to mid-July

(b) mid-June to mid-September

(c) mid-July to mid-August

(d) mid-July to mid-October

Ans-(b)

40. What are the staple food of Amazon Manioc are called?

(a) Coco

(b) Cassava

(c) Coriander

(d) Potato

Ans-(b)

41. On which river bank are Allahabad, Kanpur, Varanasi, located?

(a) River Ganga

(b) River Brahmaputra

(c) River Hooghly

(d) River Yamuna

Ans-(a)

42. Buddhist Stupa is in

(a) Ranchi (Jharkhand)

(b) Raisen (Madhya Pradesh)

(c) Kanpur (Uttar Pradesh)

(d) Lucknow (Uttar Pradesh)

Ans-(b)

43. What are the major cities located on the river Ganga?

(a) Patna

(b) Allahabad

(c) Haridwar

(d) All of these

Ans-(d)

44. The staple food in the rainforest area is

(a) Menero

(b) Menious

(c) Manico

(d) Manioc

Ans-(d)

45. _____ are built on steep slopes to create flat surfaces on which crops are grown

(a) Land

(b) Plains

(c) Terraces

(d) Plateau

Ans-(c)

46. In which of the following area tea is grown in plantations

(a) West Bengal and Assam

(b) West Bengal and Punjab

(c) Himachal Pradesh and Assam

(d) Kerala and Assam

Ans-(a)

47. The one-horned rhinoceros is found in the

(a) Brahmaputra plain

(b) Ganga plain

(c) Kaveri plain

(d) Krishna plain

Ans-(a)

48. What do you mean by the term ‘population density’?

(a) Number of persons live in one square kilometre of area

(b) Number of animals live in one square kilometre of area

(c) Number of persons live in hundred square kilometre of area

(d) None of these

Ans-(a)

49. Where did the Bengal tiger is found?

(a) Mountains

(b) Delta area

(c) Amazon

(d) Deserts

Ans-(b)

50. On Amazon basin

(a) Day and nights are almost equally cool and dry

(b) Day and nights are almost equally hot and humid

(c) Night are longer than day and are more hot and humid

(d) Day are longer than nights and are more cool and humid

Ans-(b)

51. ____ is the main occupation of the people living in area of Ganga-Brahmaputra basin where flat land is available to grow crops

(a) Mining

(b) Industry work

(c) Agriculture

(d) Service

Ans-(c)

52. Manas wildlife sanctuary is in

(a) Meghalaya

(b) Assam

(c) Nagaland

(d) Arunachal Pradesh

Ans-(b)

53. Considering kind of symbiosis, classification of parasites includes

(a) Endoparasites

(b) Ectoparasites

(c) Digestion parasites

(d) Both a and b

Ans-(d)

54. Name the birds that you are likely to find in the rain forest of the Amazon?

(a) Toucans

(b) Humming birds

(c) Both a and b

(d) None of these

Ans-(c)

55. Manas wildlife sanctuary is in

(a) Meghalaya

(b) Assam

(c) Nagaland

(d) Arunachal Pradesh

Ans-(b)

56. Cash crop grown in the area of Ganga-Brahmaputra basin

(a) Sugarcane and tea

(b) Coffee and jute

(c) Coffee and tea

(d) Sugarcane and jute

Ans-(d)

57. Name the continent in which Amazon basin is locate(d)

(a) North Africa

(b) Asia

(c) South Africa

(d) None of these

Ans-(c)

Please Share This Share this content

- Opens in a new window



- Opens in a new window

- Opens in a new window

- Opens in a new window

- Opens in a new window

- Opens in a new window

- Opens in a new window

- Opens in a new window

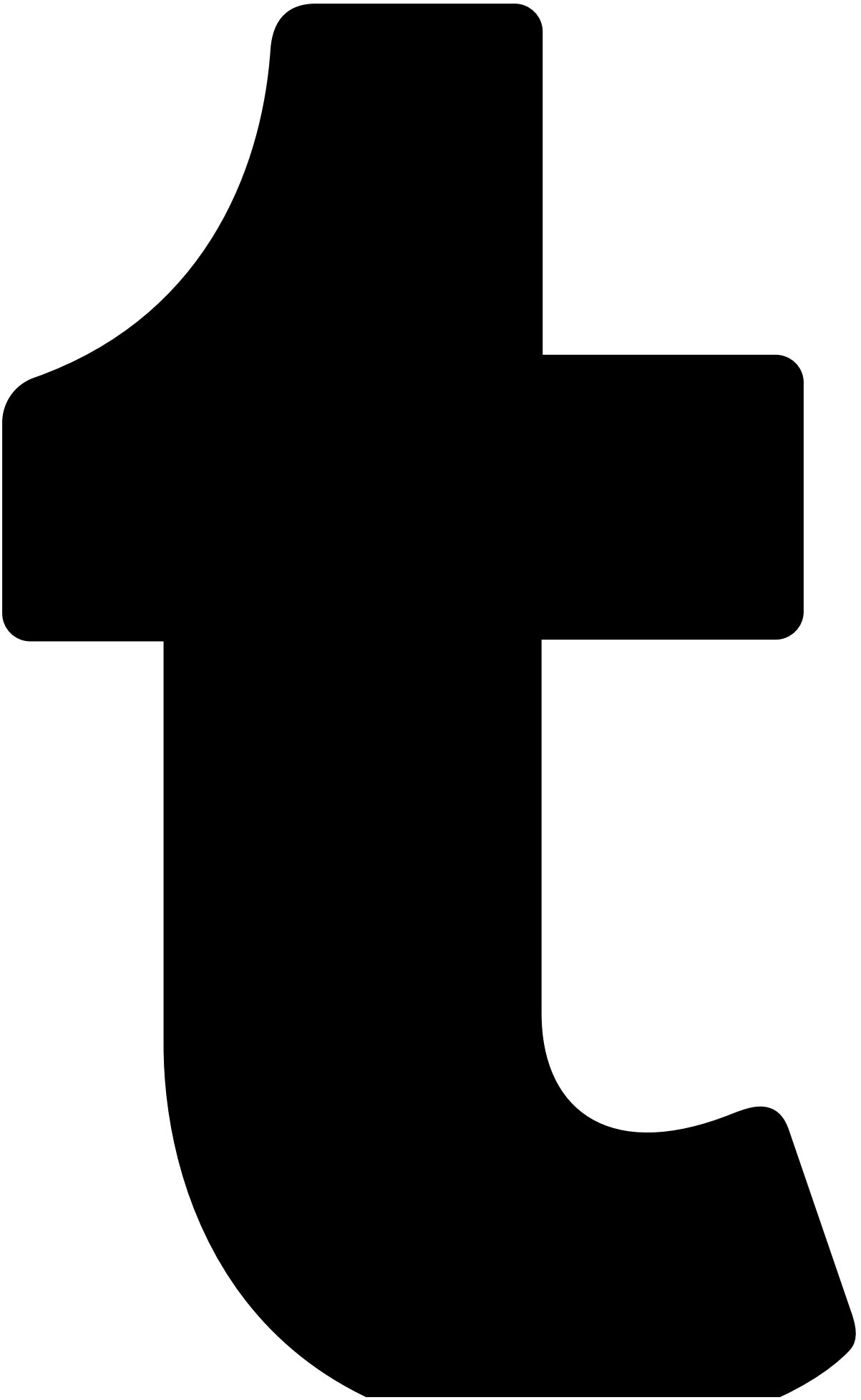

- Opens in a new window



- Opens in a new window

You Might Also Like

CUET (UG) Physics स्थिरवैद्युत विभव तथा धरिता MCQs With Answer

January 18, 2023

Class 6 Math MCQs In Hindi Chapter – 09 आँकड़ों का प्रबंधन

July 24, 2023

Class 12 Geography Practical Work MCQs Chapter 3 Graphical Representation of Data

September 21, 2023