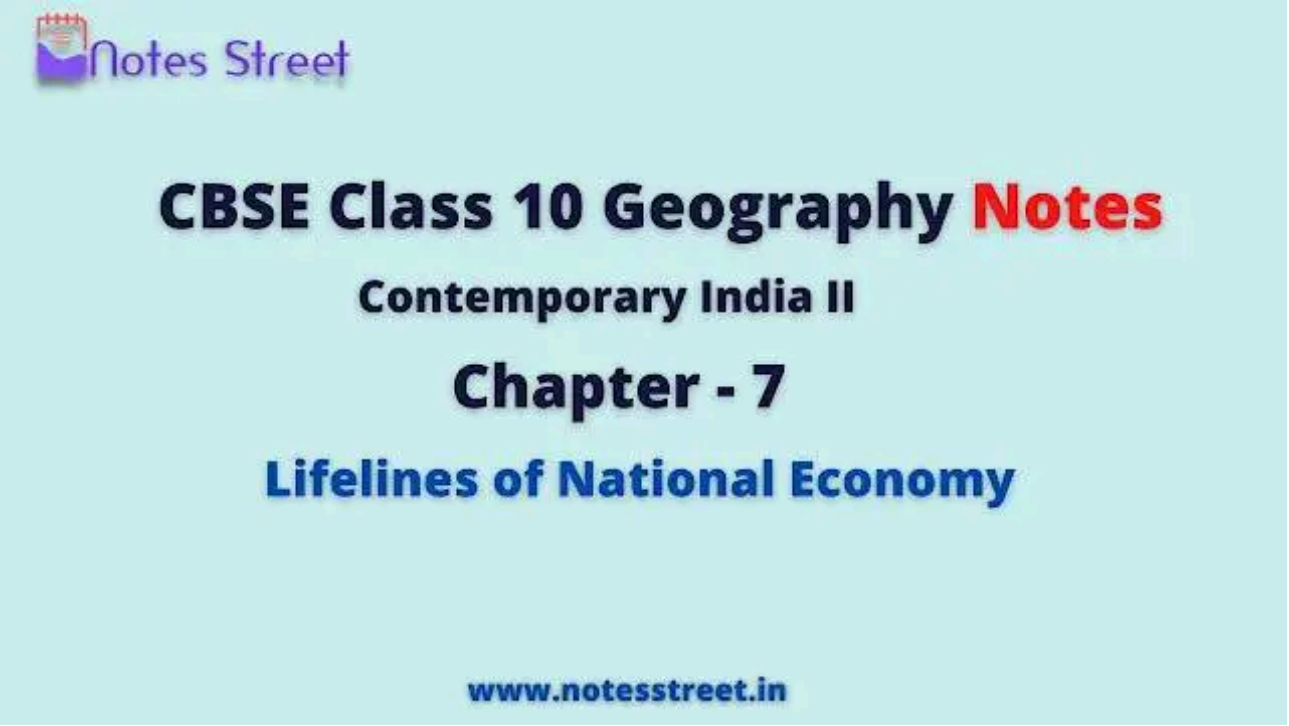

CBSE Class 10 Geography Notes Chapter - 7 Lifelines of National Economy

CBSE Class 10 Geography Notes

CBSE Class 10 Geography Notes Chapter – 7 Lifelines of National Economy

BASIC CONCEPTS

- Modern means of transport and communication serve as lifelines of our nation and its modern economy. It is thus evident that a dense and efficient network of transport and communication is a prerequisite for local, national and global trade of today.

- **Transport**

  (i) Roadways: The growing importance of road transport vis-à-vis rail transport is rooted in the Following reasons: (a) construction cost of

roads is much lower than that of railway lines, in roads can traverse comparatively more dissected and undulating topography, (c) roads San negotiate higher gradients of slopes and as such can traverse mountains such as the Himalayas, (d) road transport is economical in transportation of few persons and relatively smaller amount of goods over short distances, (e) it also provides door-to-door service, thus the cost of loading and unloading is much lower, (f) road transport is also used as a feeder to other modes of transport such as they provide a link between railway stations, air and sea ports.

(a) National Highways: National Highways link extreme parts of the country. These are the primary road systems and are laid and maintained by the Central Public Works Department (CPWD).

(b) State Highways: Roads linking a state capital with different district headquarters are known as State Highways. These roads are constructed and maintained by the State Public Works Department (PWD) in State and Union Territories.

(c) District Roads: These roads connect the district headquarters with other places of the district. These roads are maintained by the Zila Parishad.

(d) Other Roads: Rural roads, which link rural areas and villages with towns, are classified under this category.

(e) Border Roads: Apart from these, Border Roads Organisation a Government of India undertaking constructs and maintains roads in the bordering areas of the country

(ii) Railways

(a) Railways are the principal mode of transportation for freight and passengers in India.

(b) Railways also make it possible for people to conduct multifarious activities like business, Sightseeing, pilgrimage along with transportation of goods over longer distances

(c) Railways in India bind the economic life of the country as well as accelerate the development of the industry and agriculture.

(d) The distribution pattern of the Railway network in the country has been largely influenced by physiographic, economic and administrative factors.

(e) The northern plains with their vast level land, high population density and rich agricultural resources provided the most favourable condition for their growth.

(iii) Pipelines

(a) Pipeline transport network is a new arrival on the transportation map of India. In the past these were used to transport water to cities and industries.

(b) Now, these are used for transporting crude oil, petroleum products and natural gas from oil and natural gas fields to refineries, fertilizer factories and big thermal power plants Solids can also be transported through a pipeline when converted into slurry

(c) There are three important networks of pipeline transportation in the country.

- From oil field in upper Assam to Kanpur (Uttar Pradesh), via Guwahati, Barauni and Prayagraj (Allahabad)
- From Salaya in Gujarat to Jalandhar in Punjab, via Viramgam, Mathura, Delhi and Sonipat.
- Gas pipeline from Hazira in Gujarat connects Jagdishpur in Uttar Pradesh, via Vijaipur in Madhya Pradesh

(iv) Waterways

(a) Since the ancient period, India was one of the seafaring countries. Its seamen sailed far and near, thus, carrying and spreading Indian commerce and culture.

(b) Waterways are the cheapest means of transport. They are most suitable for carrying heavy and bulky goods. It is a fuel-efficient and environment friendly mode of transport

(c) Apart from these, India's trade with foreign countries is carried from the ports located along the coast. 95 per cent of the country's trade volume (68 per cent in terms of value) is moved by sea.

(d) Kandla in Kuchchh was the first port developed soon after Independence to ease the volume of trade on the Mumbai port, in the wake of loss of Karachi port to Pakistan after the Partition. Kandla is a tidal port.

(e) Mumbai is the biggest port with a spacious natural and well-sheltered harbour. The Jawaharlal Nehru port was planned with a

view to decongest the Mumbai port and serve as a hub port for this region.

(f) Marmagao port (Goa) is the premier iron ore exporting port of the country.

(g) Moving along the east coast, you would see the extreme south-eastern port of Tuticorin in Tamil Nadu. This port has a natural harbour and rich hinterland.

(h) Vishakhapatnam is the deepest landlocked and well-protected port. This port was originally, conceived as an outlet for iron ore exports.

(i) Paradwip port located in Odisha, specialises in the export of iron ore. Kolkata is an inland riverine port

(v) Airways

(a) The air travel, today, is the fastest, most comfortable and prestigious mode of transport, It can cover very difficult terrains like high mountains, dreary deserts, dense forests and also long oceanic stretches with great ease.

(b) The air transport was nationalised in 1953. On the operational side, Indian Airlines, Alliance Air, private scheduled airlines and non-scheduled operators provide domestic air services.

- **Communication**

(i) Personal communication and mass communication including television, radio, press, films, he major means of communication in the country.

(ii) The Indian postal network is the largest in the world. It handles parcels as well as personal written communications. Cards and envelopes are considered first-class mail and are airlifted between stations covering both land and air. The second-class mail includes book packets registered newspapers and periodicals

(iii) India has one of the largest telecom networks in Asia. Excluding urban places more than two-thirds of the villages in India have already been covered with Subscriber Trunk Dialling (STD) telephone facility.

(iv) Mass communication provides entertainment and creates awareness among people but various national programmes and policies. It includes radio, television, newspapers, magazines, books and films.

(v) All India Radio (Akashwani) broadcasts a variety of programmes in national, regional and local languages for various categories of people, spread over different parts of the country. Doordarshan, the national

television channel of India, is one of the largest terrestrial networks in the world.

(vi) India publishes a large number of newspapers and periodicals annually. They are of different types depending upon their periodicity. Newspapers are published in about 100 languages and dialects.

- **International Trade**

(i) The exchange of goods among people, states and countries is referred to as trade. The market is the place where such exchanges take place. Trade between two countries is called international trade.

(ii) Advancement of international trade of a country is an index to its economic prosperity. It is, therefore, considered the economic barometer for a country.

(iii) India has trade relations with all the major trading blocks and all geographical regions of the world.

(iv) India has emerged as a software giant at the international level and it is earning large foreign exchange through the export of information technology.

- **Tourism as a Trade**

(i) Tourism in India has grown substantially over the last three decades.

(ii) Tourism also promotes national integration, provides support to local handicrafts and cultural pursuits. It also helps in the development of international understanding about our culture and heritage.

(iii) There is a vast potential for development of tourism in all parts of the country. Efforts are being made to promote different types of tourism for this upcoming industry.

IMPORTANT TERMS

- Transportation: The action of transporting someone or something from one place to another.
- Consumer: A person who purchases goods and services for personal use.
- Communication: The imparting or exchanging of information by speaking, writing, or using some other medium

- Topography: The arrangement of the natural and artificial physical features of an area.
- Super Highways: A highway designed for travel at high speeds, having more than one lane for each direction of traffic, a safety strip dividing the two directions, and clove leaves to route the traffic on and off the highway
- Sea Ports: A port harbour, or town accessible to a seacoast and providing accommodation for seagoing vessels.
- Tourism: The commercial organisation and operation of holidays and visits to places of interest
- State Highways are usually roads that link important cities, towns and district headquarters within the state and connect them with National Highways or highways of neighbouring states.
- National Highways: Network of India is a network of highways that is managed and maintained by agencies of the Government of India.
- A Border Road Organisation (BRO) develops and maintains road networks in India's border areas and friendly neighbouring countries.
- Railway Network: Rail transport is a means of conveyance to passengers and goods on wheeled vehicles running on rails, also known as tracks. It is also commonly referred to as train transport.
- Trade: The action of buying and selling goods and services.

PLEASE SHARE THIS

YOU MIGHT ALSO LIKE

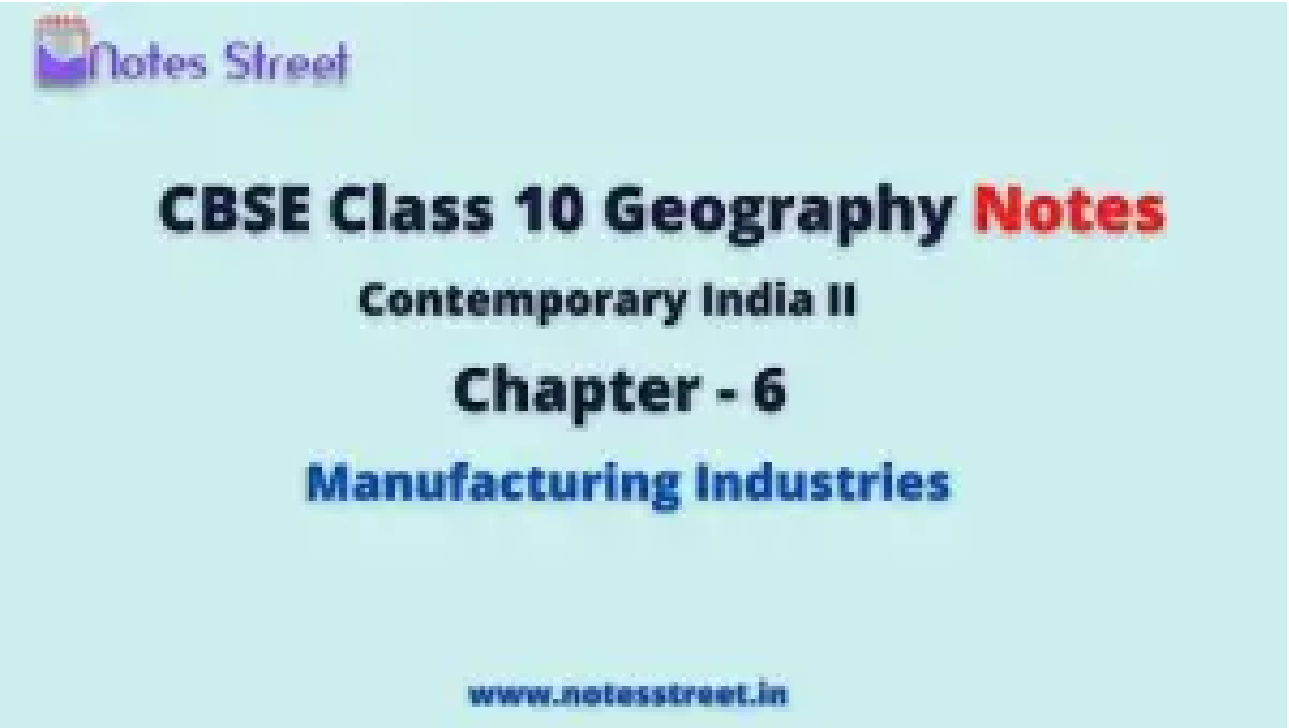

CBSE Class 10 Geography Notes Chapter – 6 Manufacturing Industries

February 20, 2022

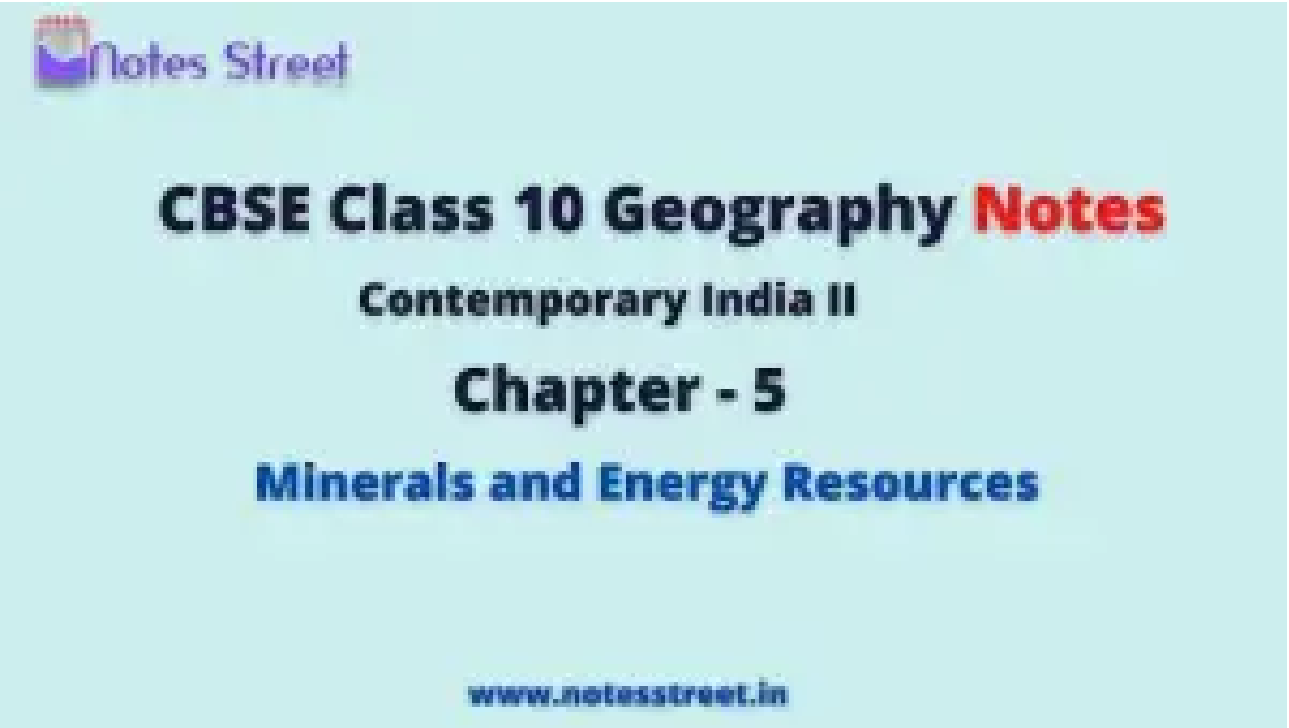

CBSE Class 10 Geography Notes Chapter – 5 Minerals and Energy Resources

February 20, 2022