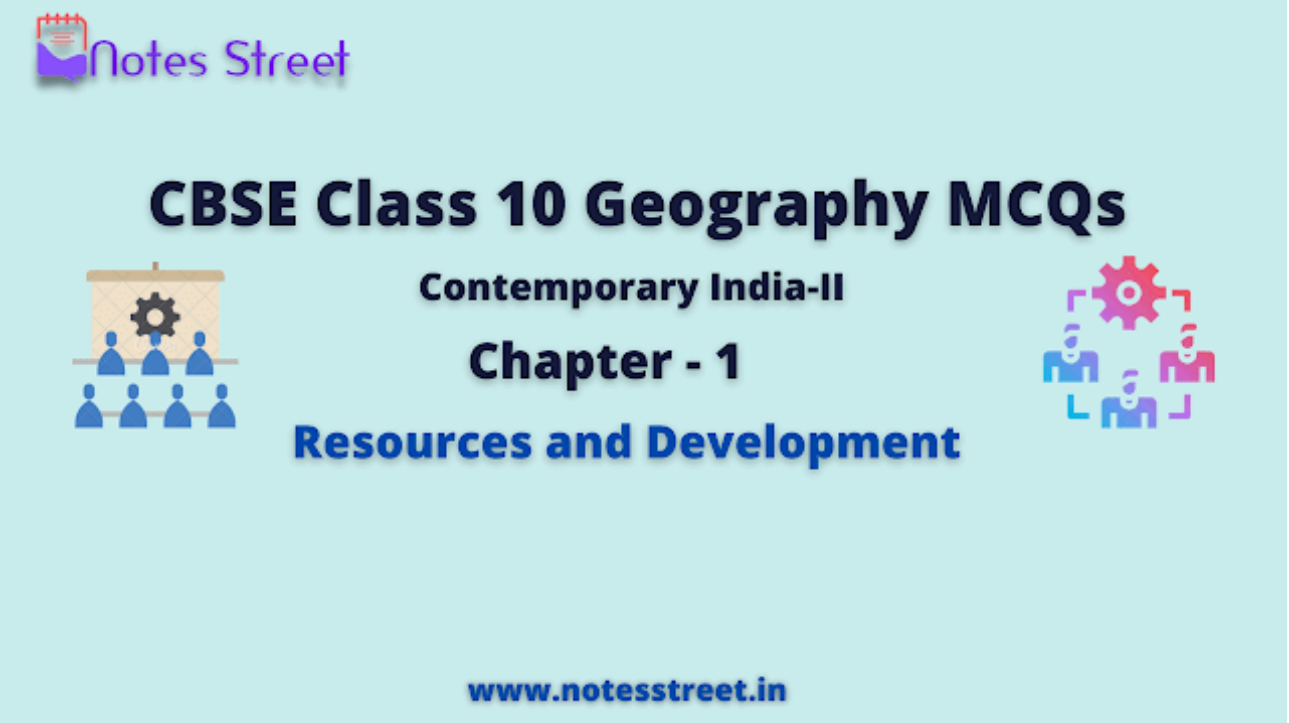

CBSE Class 10 Geography MCQs Chapter - 1 Resources and Development

CBSE Class 10 Geography MCQs

CBSE Class 10 Geography MCQs Chapter – 1 Resources and Development

1. Which one of the following is an example of Cultivable Wasteland?
(a) Gross cropped Area
(b) Uncultivable Land
(c) Barren Wasteland
(d) Current fallow Land
Ans. (b)

2. Khadar is a type of:
(a) Black soil
(b) Alluvial soil

(c) Laterite soil
(d) Desert soil
Ans. (b)

3. The resources of ownership are
(a) plantation
(b) pasture land
(c) ponds
(d) all of the above
Ans. (d)

4. Resource planning is essential for_____existence of all forms of life.
(a) ecological balance
(b) sustainable
(c) exploitation
(d) none of these
Ans. (b)

5. Which one of the following method is used to break up the force of wind?
(a) Shelter belt
(b) Strip cropping
(c) Contour ploughing
(d) Terrace farming
Ans. (b)

6.Where was the first international Earth Summit held?
(a) Rio de Janeiro
(b) Geneva
(c) Switzerland
(d) Philippines
Ans. (a)

7. Geothermal energy in Puga valley and Parvati Valley are
(a) stock resources
(b) developed resources
(c) reserve resources
(d) potential resources
Ans. (b)

8. Which soil is known as Black cotton soil?
(a) Red soil
(b) Arid soil
(c) Mountain soil
(d) Black soil
Ans. (d)

9. Land left without cultivation for one or less than one agricultural year is called
(a) culturable wasteland
(b) current fallow land
(c) wasteland
(d) none of the above
Ans. (a)

10. Resources which are surveyed and their quality and quantity have been determined
utilisation are known
(a) potential resources
(b) stock
(c) developed Resources
(d) reserves
Ans. (c)

11. Which of the following is not a measure for soil conservation?
(a) strip cropping
(b) terrace cultivation
(C) shelter belts
(d) overdrawing of groundwater
Ans. (d)

12. Which one of the following types of resource is iron ore?
(a) Renewable
(b) Biotic
(c) Flow
(d) Non-renewable
Ans. (d)

13. Under which of the following types of resources can tidal energy be put?
(a) Replenishable

(b) Human-made
(c) Abiotic
(d) Non-renewable
Ans. (a)

14 Which one of the following is the main cause of land degradation in Punjab?
(a) Intensive cultivation
(6) Deforestation
(c) Over-grazing
(d) Over irrigation
Ans. (d)

15.In which of the following states is terrace cultivation practiced?
(a) Punjab
(b) Plains of Uttar Pradesh
(c) Haryana
(d) Uttaranchal
Ans. (d)

16.In which of the following states is black soil found?
(a) Jammu and Kashmir
(b) Gujarat
(c) Rajasthan
(d) Jharkhand
Ans. (b)

17. What percentage of our land should be under forest cover according to the National Fores Policy?
(a) 33%
(b) 22.5%
(c) 31%
(d) 30%
Ans. (a)

18.Materials in the environment which have the potential to satisfy human needs but humu beings do not have appropriate technology to access them are called-
(a) Potential resource
(b) Stock
(C) Developed resource

(d) Reserves
Ans. (b)

19. India's territorial water extends up to a distance of-
(a) 12km
(b) 12 nautical miles
(c) 19.2 miles
(d) 200 nautical miles
Ans. (b)

20.Resources that take long geological time for their formation are called-
(a) Renewable resources
(b) Reserve
(c) Community resources
(d) Non-renewable resources
Ans. (d)

21. Area sown more than once in an agricultural year plus net sown area is known as-
(a) Net sown area
(b) Forest cover
(C) Waste land
(d) Gross cropped are
Ans. (a)

22. The total degraded land in our country is-
(a) 133 million hectares
(b) 130 million
(C) 140 million hectares
(d) 130 million hectares
Ans. (d)

23..In which of the following states mining gas caused severe land degradation?
(al Gujarat
(b) Jharkhand
(c) kerala
(d) Uttaranchal
Ans. (b)

24.The main cause of land defradation in Punjab, Haryana aed Western Uttar Pradesh
is _____.
(a) mining
(b) over irrigation
(c) deforestation
(d) over grazing
Ans. (b)

25.Which is the most common soil of Northern India?
(a) Black soil
(b) Laterite soll
(c) Alluvial soil
(d) Red soil
Ans. (c)

26.Red soil is mostly found in-
(a) Parts of Jammu and Kashmir
(b) Upper Ganga Plains
(c) Eastern and Southern part of Decca plateau
(d) None of the above
Ans. (c)

27. Red soil is reddish in color due to-
(a) high clay conten
(b) presence of kankar nodules in the sub soil
(c) diffusion of iron in igneous and metamorphic rocks
(d) high moisture contet
Ans. (c)

28.Which of the following is not important for soil formation?
(a) Relief
(b) Parent Rock
(c) Climate
(d) Duration of day
Ans. (d)

29.Black soil is also called-
(a) Bangar

(b) Khadar
(c) Regur
(d) Humus
Ans. (c)

30. Black soils are common in-
(a) Deccan Trap
(b) Kashmir Valley
(c) Ganga Valley
(d) Northern Plains
Ans. (a)

31. Laterite soil is very useful for growing
(a) rice, wheat and mustard
(b) tea, coffee and cashew nut
(c) pulses, sugarcane and resin
(d) none of the above
Ans. (b)

32. Black soil is deficient in-
(a) Calcium carbonate
(b) Magnesium
(c) Potash
(d) Phosphoric contents
Ans. (d)

33. Which of the following soils has self-aeration capacity?
(a) Alluvial
(b) Red soil
(c) Black soil
(d) Mountain soil
Ans. (c)

34. Ploughing along the contour lines to decelerate the flow of water down the slopes is called
(a) Strip cropping
(b) Sheet erosion
(c) Contour ploughing
(d) Terrace cultivation

Ans. (c)

35. Land that is left uncultivated for more than five agricultural years is called-
(a) Pasture land
(b) Culturable waste land
(c) Barren land
(d) Current fallow land
Ans. (b)

36. Which one of the following soils is ideal for growing cotton?
(a) Regur soil
(b) Laterite soil
(c) Desert soil
(d) Mountain soil
Ans. (a)

37. Soil is formed by the process of –
(a) Denudation
(b) Deposition
(c) Weathering
(d) all the above
Ans. (d)

38. Land left without cultivation for one or less than one agricultural year is called
(a) Culturable waste
(b) Current fallow land
(C) Waste land
(d) None of the above
Ans. (b)

39. “There is enough for everybody’s need but not for anybody’s greed’. Who said this?
(a) Jawaharlal Nehru
(b) Atal Bihari Bajpai
(c) M. K. Gandhi
(d) Sunder Lal Bahuguna
Ans. (c)

40.Resources which are surveyed and their quantity and quality have been determined for utilization are known as-

(a) Potential resources

(b) Stock

(c) Developed resources

(d) Reserves

Ans. (c)

41. Which one of the following statements is correct as regard to international resources:

(a) They are regulated by international institutions.

(b) They lie beyond the territorial waters.

(c) They are found along the international frontier

(d) They are not yet developed.

Ans. (a)

42. The most widespread relief feature of India is-

(a) Mountains

(b) Forests

(c) Plains

(d) Plateaus

Ans. (c)

43.Resources which are found in a region, but have not been utilized are known as

(a) Renewable

(b) Developed

(c) National

(d) Potential

Ans. (d)

41. Which one of the following statements is true about the term resources?

(a) Resources are all the things that are found in nature.

(b) They are free gifts of nature.

(C) They are the functions of human activities.

(d) Things which cannot be used to fulfill our needs.

Ans. (a)

45. Soil formed by intense leaching is called

(a) Alluvial soil

(b) Red soil
(c) Laterite soil
(d) Desert soil
Ans. (c)

46. Old alluvial soil is also called-
(a) Khadar
(b) Hangar
(c) Terrai
(d) Hangar
Ans. (b)

47. _____is a method of growing rows of trees in arid regions.
(a) Shelterbelts
(b) Contour ploughing
(c) Terrace farming
(d) None of the above
Ans. (a)

48. Land consisting of many gullies and ravines are called
(a) Gullies
(b) Bad lands
(c) Basin
(d) Slopes
Ans. (b)

49. Which among the following soils have high water retaining capacity?
(a) Alluvial soil
(b) Laterite soil
(c) Black soil
(d) Arid soil
Ans. (c)

50. Which soil is the most widespread soil of India?
(a) Black soil
(b) Laterite soil
(c) Alluvial soil
(d) Red and yellow soi
Ans. (c)

51. Fossil fuels are examples of

(a) Renewable

(b) Non-renewable

(c) Non-recyclable

(d) All of the above

Ans. (b)

52. Protection of soil from erosion is called-

(a) Sheet erosion

(b) Soil conservation

(c) Shelter belts

(d) None of the above

Ans. (b)

53. Solar energy is an example of

(a) Renewable resource

(b) Non-renewable resource

(c) Abiotic resource

(d) National resource

Ans. (a)

54. Anything which can be used for satisfying the human needs is called 2-

(a) Human resource

(b) International resource

(c) Resource

(d) Reserve

Ans. (c)

55. Which are the two main types of resources?

(a) Abiotic and Biotic

(b) Renewable and non-renewable

(c) Natural and human

(d) National and international

Ans. (a)

56.Non-renewable resources are further divided into-

(a) Renewable and non-renewable

(b) Biotic and abiotic

(c) Recyclable and non-recyclable
(d) None of the above
Ans. (b)

57.Name any two community owned resources?
(a) Solar energy and wind energy
(b) Canals and railways
(C) Public parks and picnic spots
(d) Oceans and seas
Ans. (c)

58.Which one of the following is an example of cultivable waste land?
(a) Uncultivable land
(b) Barren wasteland
(C) Creating shelter belts
(d) Gross cropped area
Ans. (a)

59.Which of the following methods does not help in soil conservation?
(a) Contour ploughing
(b) Strip cropping
(c) Current Pallow land
(d) Ploughing up and down the slope
Ans. (d)

60.Which one of the following is a renewable resource?
(a) Coal
(b) Petroleum
(c) Solar energy
(d) Fossil fuel
Ans. (c)

61.The alluvial soil consists of-
(a) sand
(b) clay
(c) silt
(d) all of the above
Ans. (d)

62.Which one of the following does not check land degradation?

(a) Control on overgrazing

(b) Creating shelter belts

(c) Deforestation

(d) Afforestation

Ans. (c)

63.Burial ground is an example of-

(a) Community owned resource

(b) National resource

(c) Individual resource

(d) International resource

Ans. (a)

64.Which cold desert is relatively isolated from the rest of the country

(a) Leh

(b) Kargil

(C) Ladakh

(d) Dras

Ans. (c)

65.Which one of the following states has laterite soil?a)

(a) Uttar Pradesh

(b) Bihar

(C) Rajasthan

(d) Meghalaya

Ans. (d)

66.Which one of the following is not the community owned resources?

(a) Grazing grounds

(b) Burial grounds.

(c) Village ponds

(d) Privately owned house

Ans. (d)

67.How can the resources be classified on the basis of their origin?

(a) Biotic and Abiotic

(b) Renewable and Non-renewable

(c) Individual and community

(d) Potential and Reserve

Ans. (b)

68.Which among the following is a type of resources classified on the basis of exhaustibility?

(a) Biotic and Non-biotic

(b) Renewable and Non-Renewable

(c) National and International

(d) Potential and Reserve

Ans. (b)

69. What is the arrangement of soil in different layers or horizons known as?

(a) Soil composition

(b) Soil erosion

(c) Soil profile

(d) Soil texture

Ans. (c)

70. Khadar is a type of

(a) Black soil

(b) Alluvial soil

(c) Laterite soil

(d) Desert soil

Ans. (b)

71. Which one of the following is an example of biotic resources?

(a) Rock

(b) Mountain

(C) Mineral

(d) Flora

Ans. (d)

72. Which one of the following is an example of non-renewable resource?

(c) Petroleum

(d) Hydel power

(a) Solar energy

(b) Tidal energy

Ans. (c)

73.On the basis of ownership resources are classified into-
(a) two types
(b) three types
(c) four types
(d) none of the above
Ans. (c)

74.The process of transformation of things available in our environment involves an inte
relationship between_____
(a) nature and technology
(b) nature, technology and institutions
(c) environment and nature
(d) environment and technology
Ans. (b)

75. Are resources free gifts of nature?
(a) Yes, they are
(b) They are not, resources are a function of human activities.
(c) Yes, resources are nurtured by nature,
(d) No, anything from which a product can be manufactured.
Ans. (b)

76. Where are biotic resources obtained from?
(a) From biosphere and have life such as human beings, flora and fauna, fisheries, livestock
(b) From composing of non-living things
(c) From reproduction by physical, chemical or mechanical processes
(d) From minerals and fossil fuels
Ans. (a)

77. What are renewable resources?
(a) These are obtained from biosphere and have life.
(b) These are composed of non-living things.
(C) Which can be renewed or reproduced by physical, chemical or mechanical processes
(d) These are from biosphere and have life such as human beings, flora and fauna, fisheries stock.
Ans. (a)

78. Give examples of renewable resources.
(a) Minerals and fossil fuels
(b) Solar and wind energy, water, forests and wildlife
(c) Rocks and metals
(d) Flora, fauna, fisheries and livestock
Ans. (a)

79. Give examples of national resources.
(a) Plots and houses
(b) Public parks, playgrounds, grazing grounds and burial grounds
(c) Oceanic resources
(d) Minerals, water resources, forests, wild life and land.
Ans. (d)

80. What are potential resources?
(a) Resources which can be renewed or reproduced.
(b) Resources which are found in a region, but have not been utilized.
(c) Resources which are surveyed and their quality and quantity have been determined to
utilization.
(d) Those things which are composed of non-living things.
Ans. (b)

81. What are developed resources?
(a) Resources which are surveyed and their quality and quantity have been determined for utiliza
(b) Resources which can be renewed or reproduced.
(c) Those things which are composed of non-living things.
(d) Resources which are found in a region, but have not been utilized.
Ans. (c)

82. What is a stock?
(a) Resources which can be renewed or reproduced.
(b) Resources which are found in a region, but have not been utilized.
(c) Materials in the environment which have the potential to satisfy human needs but hun
beings do not have the appropriate technology to access these.
(d) Solar and wind energy, water, forests and wildlife.

Ans. (a)

83.Human beings used resources indiscriminately and this has led to following major problems,

(a) Not well-planned use of these resources

(b) Wastage of resources

(c) Not many problems

(d) Accumulation of resources in few hands

which are these problems?

Ans. (d)

84.What is sustainable development?

(a) Well planned use of resources and development.

(b) Accumulation of resources and then using them accordingly.

(c) Development should take place without damaging the environment keeping in mind the future generations.

(d) Using materials in the environment which

Ans. (c)

85. Why do we need resource planning?

(a) Because of enormous diversity in the availability of resources

(b) Because we need to think of future generations

(c) Because we need to consider materials in the environment which have the potential to satisfy human needs

(d) Because of the need to collect materials and resources and then using them accordingly

Ans. (a)

86.What does resource planning in India involve?

(a) Defining the number of resources

(b) Surveying, mapping and qualitative estimation and measurement of the resources

(C) Taking government permission

(d) Matching the resource development plans

with overall national development plans

Ans. (b)

87. Why is conservation of the resources important?
(a) So that they don't get wasted
(b) Irrational consumption and over utilization of resources may lead to socio-economic and
environmental problems
(C) For evolving a planning structure endowed with appropriate technology, skill and institutional set up
(d) For matching the resource development plan with overall national developmental plan
Ans. (b)

88.Which type of land is not used for cultivation?
(a) Already on crop production
(b) Land put to non-agricultural uses, e.g. buildings, roads, factories, etc.
(c) All types of land
(d) Black soil land
Ans. (b)

89.What is the total geographical area of India?
(a) 3.25 million sq km
(b) 3.20 million sq km
(c) 3.22 million sq km
(d) 3.28 million sq km
Ans. (d)

90._____percentage of our basic needs for food, shelter and clothing are obtained from
land.
(a) 70
(b) 80
(C) 90
(d) 95
Ans. (d)

91.Which human activities have led to land degradation?
(a) Deforestation and overgrazing
(b) Agriculture
(c) Buildings and making roads
(d) Factories and industries

Ans. (a)

92. How can we solve the problem of land degradation?
(a) A flore station
(b) More agricultural crops
(C) Try to grow plants in desert areas
(d) Keep agricultural land free
Ans. (a)

93. Which important river system has formed alluvial soil
(a) Ganga basin
(b) Kaveri basin
(c) Beas basin
(d) Godavari basin
Ans. (a)

94.Alluvial soils are favorable for the growth of-
(a) Sugarcane, paddy and wheat
(b) Nuts
(c) Palm
(d) Cotton
Ans. (a)

95.Where among the following is black soll mostly found?
(a) Karnataka and Kerala
(b) Plateaus of Maharashtra, Saurashtra and Malwa
(c) Rajasthan and Gujarat
(d) Assam
Ans. (b)

96.Where are red soils mostly found
(a) Deccan plateau and parts of Odisha
(b) Kerala and Karnataka
(c) Rajasthan and Gujarat
(d) Maharashtra and Madhya Pradesh
Ans. (b)

97.Where is arid soil found in India?
(a) Rajasthan

(b) Odisha
(c) Assam
(d) Madhya Pradesh
Ans. (a)

98.When the land becomes unfit for cultivation is known as-
(a) Fallow land
(b) Bad land
(c) Machines
(d) Deserted land
Ans. (b)

99. The processes of _____and _____go on simultaneously and generally there is a
between two.
(a) denudation and erosion
(b) soil formation and erosion
(c) soil formation and denudation
(d) climatic conditions and soil erosion
Ans. (b)

100. The running water cuts through the clayey soils and makes deep channels as
(a) tributaries
(d) drains
(c) gullies
(b) ravines
Ans. (c)

101.Which one of the following is a human made resource?
(a) Petroleum
(b) Forests
(c) Waste land
(d) Land
Ans. (c)

102. The conceanic resources beyond 200 km of exclusive economic zone can be termed as which, following
(a) Individual resources
(b) Community owned resources

(c) National resources
(d) International resources
Ans. (d)

103.What was the main contribution of the Brundtland Commission Report, 1987?
(a) Sustainable development as means for resource conservation
(b) Advocated resource conservation for the first time
(c) Presented Gandhian philosophy
(d) All the above
Ans. (a)

104.What is the land used for grazing cattle and livestock known as?
(a) Forest
(b) Barren land
(c) Pasture
(d) Fallow land
Ans. (c)

105.Which of the following is the root cause for resource depletion at global level according Gandhiji?
(a) Conservation of resources
(6) Use of resources
(c) Greedy and selfish individuals and exploitative nature of modern technology
(d) Backward technology
Ans. (c)

106. Which of the following regions in India possesses rich reserves of minerals and fossil fuels
(a) Plains
(b) Mountains
(c) Plateaus
(d) Deserts
Ans. (c)

107. Laterite has been derived from the Greek word Later which means-
(a) Brick
(b) Rock
(C) Stone
(d) Mountain

Ans. (a)

108.In which of the following states is overgrazing responsible for land degradation?

(a) Jharkhand and Odisha

(b) Madhya Pradesh and Rajasthan

(c) Punjab and Haryana

(d) Kerala and Tamil Nadu

Ans.(b)

109.The mountain share in the total land area is

(a) 30%

(b) 27%

(c) 49%

(d) 40%

Ans.(a)

110.What is the percentage share of plains in the total land area?

(a) 43%

(b) 23%

(c) 33%

(d) 27%

Ans.(a)

111.When the top soil is washed away it is called as-

(a) sheet erosion

(b) later erosion

(c) soil erosion

(d) land erosion

Ans.(c)

112.What is strip cropping?

(a) Planting lines of trees

(b) Planting between water beds

(c) Cultivating making steps

(d) Strips of grass are left to grow between the crops

Ans.(d)

113. What are shelter belts?

(a) Cultivating making steps
(b) Planting lines of trees to create shelter
(C) Planting huge bush plants in desert
(d) Planting near water beds
Ans.(b)

114. What is the contribution of shelter belts?
(a) To conserve water
(b) To conserve soil
(c) To stabilize sand dunes
(d) To maintain forests
Ans.(c)

115. What type of resources are rocks?
(a) Abiotic
(b) Renewable
(c) Potential
(d) Biotic
Ans.(a)

116. Water in the dams, forests, etc. is a
resource, which can be used in the future.
(a) potential
(b) reserve108.In which of the following states is overgrazing responsible for land degradation?
(a) Jharkhand and Odisha
(b) Madhya Pradesh and Rajasthan
(c) Punjab and Haryana
(d) Kerala and Tamil Nadu
Ans.(b)

117. What is the main reason behind global ecological crisis such as global warming and environmental pollution?
(a) Depletion of resources
(b) Accumulation of resources in a few hands
(c) Indiscriminate exploitation of resources (d) Use of resources
Ans.(c)

118. From which five-year plan has India made concerted efforts for achieving the goals of resource planning?

(a) First five-year plan

(b) Fifth five-year plan

(c) Annual plans

(d) Tenth five-year plan

Ans.(a)

119. On the basis of ownership, plantation can be considered as which of the following types of resources?

(a) Individual resource

(b) Community owned resource

(c) National resource

(d) International resource

Ans.(a)

120. What is necessary for sustained quality of life and global peace?

(a) Stopping use of resources

(b) Saving resources for future

(c) Exploitation of resources

(d) Equitable distribution of resources

Ans.(d)

PLEASE SHARE THIS

YOU MIGHT ALSO LIKE

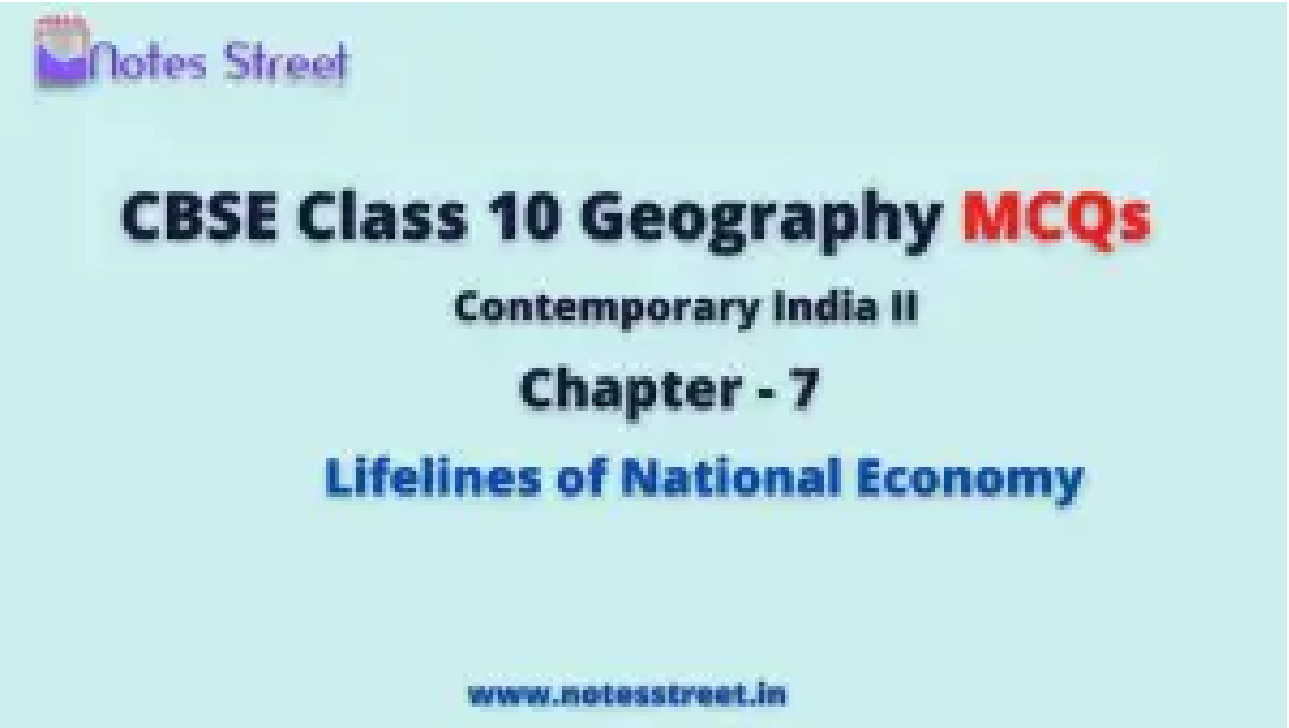

CBSE Class 10 Geography MCQs Chapter – 7 Lifelines of National Economy

April 21, 2022

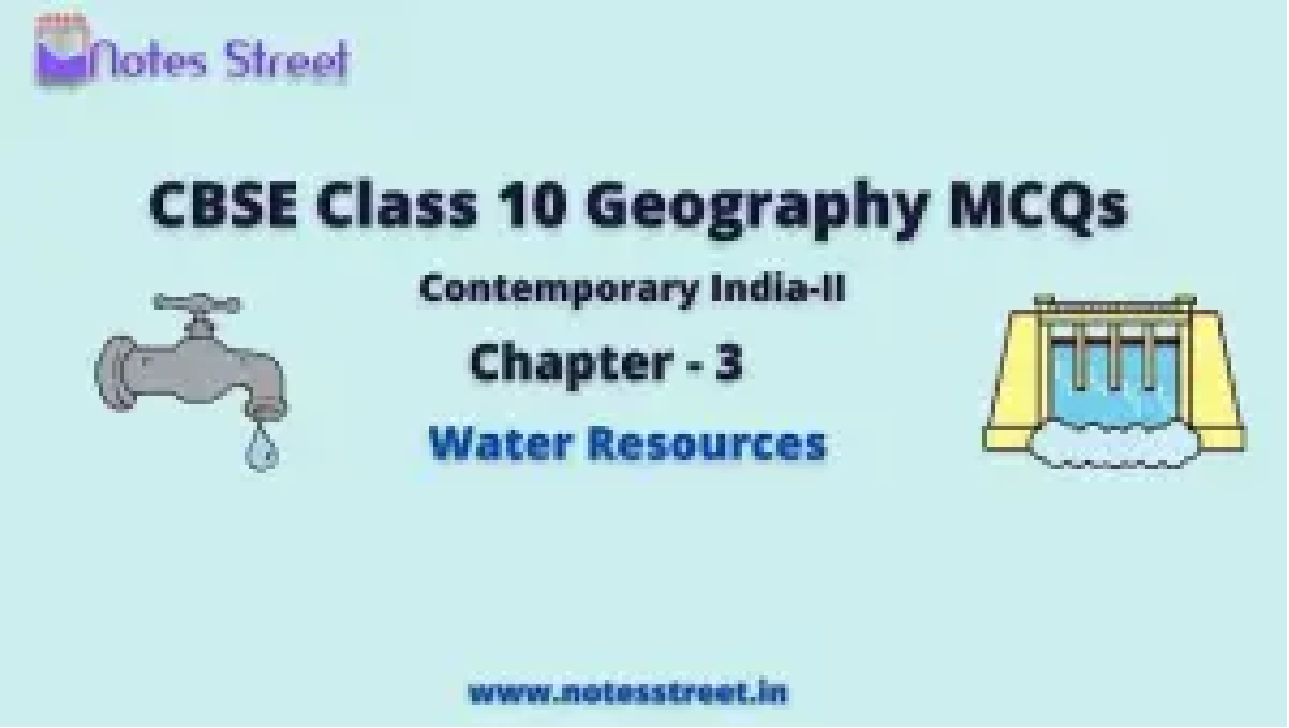

CBSE Class 10 Geography MCQs Chapter – 3 Water Resources

November 2, 2021

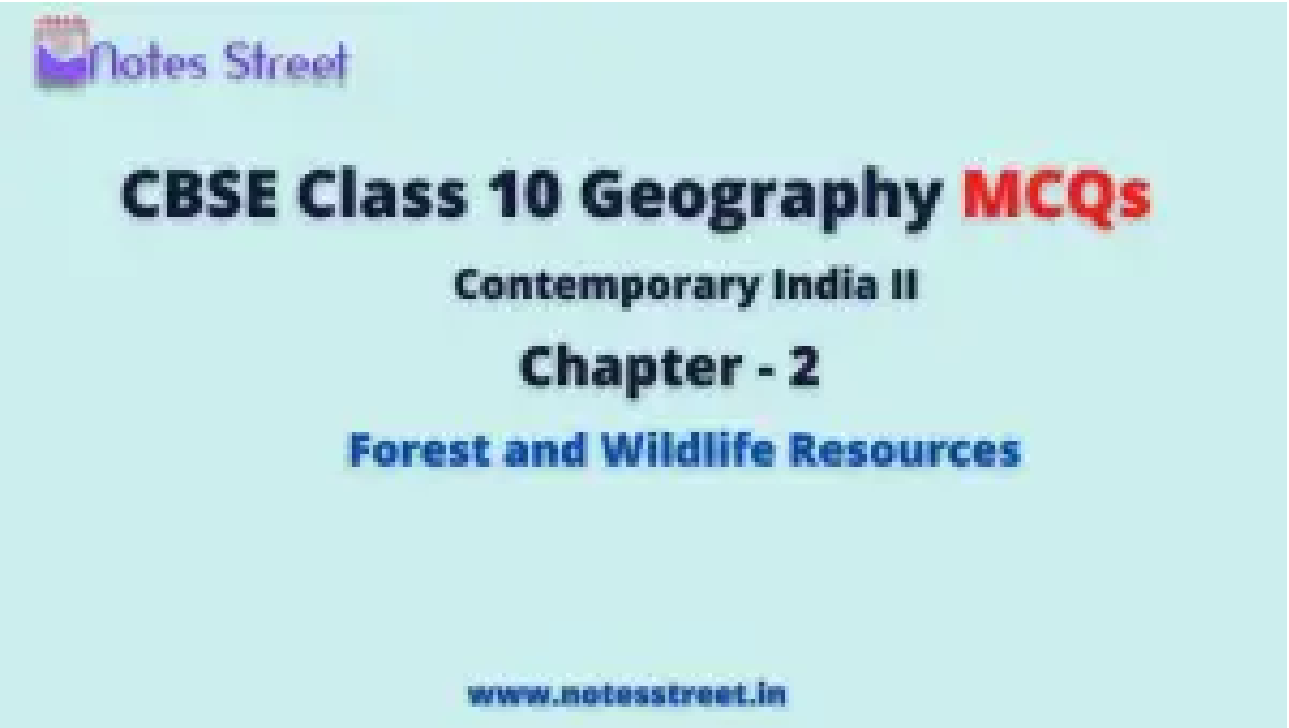

CBSE Class 10 Geography MCQs Chapter – 2 Forest and Wildlife Resources

April 21, 2022