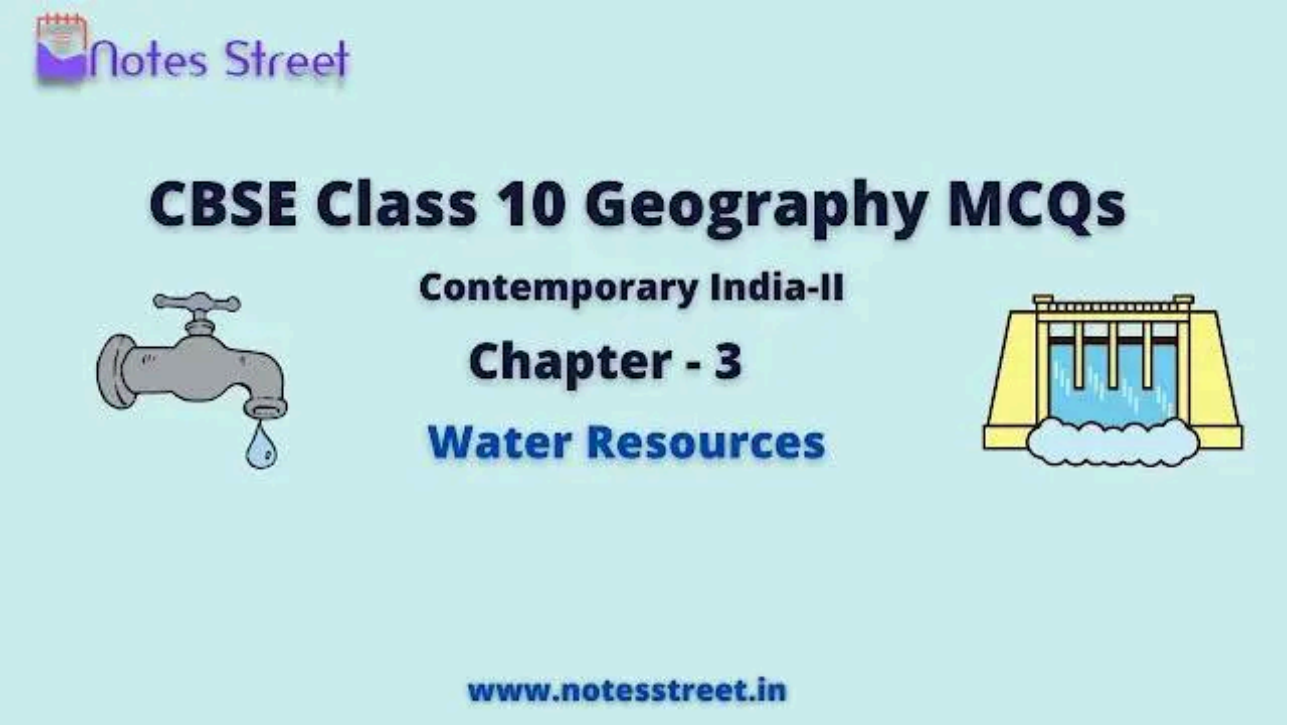

CBSE Class 10 Geography MCQs Chapter - 3 Water Resources

CBSE Class 10 Geography MCQs

CBSE Class 10 Geography MCQs Chapter – 3 Water Resources

1.Rana Pratap Sagar Dam is located in

(a) Odisha

(b) Utarakhand

(c) Rajasthan

(d) Andhra Pradesh

Ans.(c)

2. Bamboo drip 1rrigation system is prevalent in

(a) Manipur

(b) Meghalaya

(c) Mizoram
(d) Madhya Pradesh
Ans.(b)

3. Which options are true for dams?
(a) They check the sediment flow in rivers.
(b) Dams have helped provide ample water for agriculture.
(c) Dams have solved problems of drought in Central India.
(d) Dams have helped in power generation.
Ans.(b)

4. The Narmada Bachao Andolan is associated with
(a) Sardar Sarovar Dam
(b) Tehri Dam
(c) Hirakund Danm
(d) Gandhi Sagar Dam
Ans.(a)

5. The remote village that has earned the rare distinction of being rich in rainwater?
(a) Gari
(b) Kaza
(c) Gendathur
(d) none of the above
Ans.(c)

6.Name the state where almost all the houses traditionally had tankas.
(a) Rajasthan
(6) Odisha
c) Tamil Nadu
(d) Maharashtra
Ans.(c)

7. Which of the following rivers is not having any multipurpose river project?
(b) Mahanadi
(a) Satluj-Beas
(c) Narmada
(d) Yamuna
Ans.(d)

8. During whose reign were the dams, lakes and irrigation systems built extensively?

(a) Ashoka

(6) Chandragupta Maurya

(c) Akbar

(d) None of these

Ans.(b)

9. What were “Guls’?

(a) Reservoirs

(b) Artificial lakes

(c) Diversion channels

(d) None of these

Ans.(c)

10. Tehri Dam Aandolan is mainly concerned with the state of

(a) Uttarakhand

(b) Jharkhand

(c) Chhattisgarh

(d) None of these states

Ans.(a)

11. Which one of the following statements is not an argument in favor of multi-purpose river projects

(a) Multi-purpose projects bring water to hose areas which suffer from water scarcity.

(b) Multi-purpose projects by regulating water flow help to control floods.

(c) Multi-purpose projects lead to large scale displacements and loss of livelihood.

(d) Multi-purpose projects generate electricity for our industries and our homes.

Ans.(c)

12. Which among the following is not a source of fresh water?

(a) Glaciers and ice sheets

(b) Groundwater

(c) Surface runoff

(d) Oceans

Ans.(d)

13. According to Falkan Mark, water stress ocean when

(a) water availability is less than 1000 cubic meter per person per day
(b) there is no water scarcity
(c) there is flood
(d) water availability is more than 2000
cubic meter per person per day
Ans.(a)

14. Which of the following is not cause of water scarcity?
(a) Growing population
(b) Growing water intensive crop
(c) Expansion of irrigational facility
(d) Water harvesting techniques
Ans.(d)

15. Bhakra Nangal River Valley Project is made on the river-
(a) Sutlej-Beas
(b) Ravi-Chenab
(c) Ganga
(d) Son
Ans.(a)

16. Hirakud dam is constructed on the river-
(a) Ganga
(b) Manjira
(c) Manas
(d) Mahanadi
Ans.(d)

17. Water of Bhakra Nangal Project is being used mainly for-
(a) Hydel power and irrigation
(b) Fish breeding and navigation
(c) Industrial use
(d) Flood control
Ans.(a)

18. The diversion channels seen in the Western Himalayas are called-
(a) Guls or kuls
(b) Khadins
(c) Johads

(d) Recharge pits

Ans.(a)

19. Agricultural fields which are used as rainfed storage structures are called-

(a) Kuls

(6) Khadins/Johads

(c) Recharge pits

(d) None of the above

Ans.(b)

20. Underground tanks seen in Rajasthan to store rainwater for drinking is called-

(a) Tankas

(6) Khadin

(c) Ponds

(d) Kuls

Ans.(a)

21.In Western Rajasthan today plenty of water is available due to-

(a) rooftop water harvesting

(b) perennial Rajasthan canal

(c) construction of Tankas

(d) none of the above

Ans.(b)

22. The only state which has made rooftop rainwater harvesting structure compulsory to houses is-

(a) Andhra Pradesh

(b) Karnataka

(c) Tamil Nadu

(d) West Bengal

Ans.(c)

23. Which one of the following is not an adverse effect of irrigation?

(a) Irrigation changes cropping pattern

(b) Water intensive crops are grown in dry are

(c) Salinization of soil

(d) Increases crop yield

Ans.(d)

24. Which of the following social movements is/are not a resistance to multi-purpose projects?

(a) Narmada Bachao Andolan

(b) Navdanya

(c) Chipko Movement

(d) Both (b) and (c)

Ans.(d)

25. The major source of fresh water in India is-

(a) rainfall

(b)ground water

(c)atmospheric water

(d) ocea water

Ans.(b)

26.Rooftop rainwater harvesting is a technique to recharge-

(a) ground water

(b) river water

C) lake water

(d) sea water

Ans.(a)

27. How much of earth's surface is covered with water?

(a) One-fourth

(b) Half

(c)Three-fourth

(d) Two-third

Ans.(c)

28.Sardar Sarovar Dam is situated on the river named-

(a) Ganga

(b) Godavari

(c) Mahanadi

(d) Narmada

Ans.(d)

29.Underground tanks seen in Rajasthan to store rainwater for drinking is called-

(a) Tankas

(6) Khadin

(c) Ponds
(d) Kuls
Ans.(a)

30.Nagarjuna Sagar Dam is built on which river?
(a) Chenab
(b) Mahanadi
(c) Krishna
(d) Satlej
Ans.(c)

31. On which of the following rivers is Koyena Dam built?
(a) Krishna
(b) Kaveri
(c) Ganga
(d) Mahanadi
Ans.(a)

32.What percentage of the total volume of world's water is estimated to exist as oceans?
(a) 94.5%
(b) 95.5%
(c) 96.59
(d) 97.59%
Ans.(c)

33.In which of the following regions, people built Guls and Kuls for irrigation?
(a) Northern Plains
(b) Western Himalayas
(c) Coastal areas
(d) None of the above
Ans.(b)

34. What is the contribution of hydroelectricity in the total generation of electricity?
(a) 52%
(6) 42%
(c) 32%
(d) 22%
Ans.(d)

35.On which of the following rivers Mettur dam is constructed?
(a) River kaveri
(b) River Krishna
(c)River Godavari
(d) River Mahanadi
Ans.(a)

36.Rooftop rainwater harvesting system in Rajasthan is known as-
(a) Guls
(b) Kuls
(c)Tankas
(d) Babos
Ans.(c)

37.Which of the following structures are known as Tankas?
(a) Underground tankas for storing rainwater from rooftops for drinking purpose.
(b) Tanks constructed on roof tops for storing rainwater.
(c) Tanks constructed in agricultural fields to store rainwater
(d) Tanks constructed to store flood water
Ans.(a)

38.Which one of the following is not an adverse effect of dams?
(a) Inter-state water dispute
(b) Excessive sedimentation of reservoir
(c) Displacement of population
(d) Flood control
Ans.(d)

39.Due to which of the following reasons are rooftop rainwater harvesting commonly practiced, particularly in Rajasthan?
(a) To store water for irrigation
(b) To keep house cool
(c) To store drinking water
(d) To clean rooftops
Ans.(c)

40.In which of the following areas are Guls and Kuls used to channel water for agriculture?

(a) Deccan Plateau
(b) Deserts of Rajasthan
(c)Western Himalayas
(d) Ganga Plains
Ans.(c)

41. Drip irrigation system is a means of_____ conservation.
(a) water
(b) fauna
(c) flora
(d) forests
Ans.(a)

42. Different social groups do not have_____ access to water:
(a) special
(b) equal
(c) different
(d) none of the above
Ans.(b)

43. Multi-purpose dams were launched in India after
(a) 1957
(b) independence
(c) 1962
(d) none of the above
Ans.(b)

44. Why is water scarcity mainly caused?
(a) Water pollution
(b) Excessive use and unequal access to water
(c) Water management
(d) Using for utility
Ans.(b)

45. According to hydrological cycle, how can freshwater be obtained?
(a) Snow
(b) Rainwater
(c) Ground water
(d) Drainage

Ans.(c)

46. Even when water is available in many cities in abundance why is there water scarcity?

(a) Using to utility

(b) Unequal distribution of water

(c) Default in technical areas

(d) Lack of infrastructure for proper distribution

Ans.(b)

47. Who is the largest consumer of water?

(a) City dwellers

(b) Irrigation

(c) Villages

(d) Industries

Ans.(b)

48. How can we revolutionise agriculture?

(a) By building dams

(b) By releasing more water

(c) By making rainwater reserves

(d) Through developing drought resistant crops and dry farming techniques

Ans.(d)

49. Most farmers own wells and tube wells and their farms for irrigation to increase their production, what adverse effect can this have?

(a) Falling groundwater levels, adversely affecting water availability

(b) Imbalance in minerals for soil

(c) Unequal distribution of water

(d) Could be technical defaults

Ans.(a)

50. Post-independence India witnessed intensive_____.

(a) agriculture

(b) economic problems

(c) industrialization and urbanization

(d) deforestation

Ans.(c)

51. How did the increasing number of industries affect the water condition?

(a) No effect on water

(b) Pressure on existing freshwater

(c) Balance between use of water and industry

(d) Unequal distribution of water

Ans.(b)

52. In India hydroelectric power_____contributes approximately percent of the total electricity produced.

(a) 22

(6) 25

(c) 20

(d) 26

Ans.(a)

53. Which factors have aggravated the water and energy problems in India?

(a) Multiplying urban centers

(b) Dams

(c) Afforestation

(d) Agriculture

Ans.(a)

54. How are most of the housing societies or colonies in the cities resourcing their water needs?

(a) City water works

(b) Own groundwater pumping devices

(c) Community water pumps

(d) Individual motors

Ans.(b)

55. Even if there is ample amount of water in certain places there is hazardous water pollution, what are the causes?

(a) Domestic and industrial wastes

(b) Wastage of water

(c) Over storage

(d) Community water pumps

Ans.(a)

56. What are the causes for the Indian rivers to become toxic?

(a) Fossils
(b) Agricultural
(c) Conservation of water
(d) Industrialization
Ans.(d)

57. What are the important things to do to prevent degradation of our natural ecosystems?
(a) Urbanization
(b) Industrialization
(c) Conserve and manage our water resources to safeguard ourselves from health hazards
(d) Modern agriculture
Ans.(c)

58. What will impoverish this water resource and cause an ecological crisis that may have a profound impact on our lives?
(a) Industrialization
(b) Modern agriculture
(c) Urbanization
(d) Over exploitation and mismanagement of water resources
Ans.(d)

59. What is a barrier across flowing water that obstructs, directs or retards the flow, often creating a reservoir, lake or impoundment?
(a) Canal
(b) Embankment
(C) Dam
(d) Lake
Ans.(c)

60. What is the purpose of building dams?
(a) For embankment
(b) Flood control
(c) Storage
(d) Water animals' conservation
Ans.(b)

61. Which among the following is a multi-purpose dam which is used for conservation of water with flood control?

(a) Satluj-Beas river basin

(b) Bhakra-Nangal Project

(c) Hirakud Project

(d) Tehri Dam

Ans.(c)

62. Jawaharlal Nehru proudly proclaimed the dams as the_____.

(a) saviors of India

(b) temples of modern India

(c) future of India

(d) complexes of India

Ans.(b)

63. Why did Jawaharlal Nehru call dams as Temples of Modern India?

(a) They were multi-purpose in nature.

(b) Irrigation became better.

(c) Development of agriculture and the village economy with rapid industrialization and growth of the urban economy.

(d) Hydel power became ample.

Ans.(c)

64. Why have multi-purpose projects and large dams have come under great scrutiny and opposition recently?

(a) The positioning of the dams is not technically correct.

(b) Regulating and damming of rivers affect their natural flow, causing poor sedimentation at
the bottom of the reservoir.

(c) Chances of floods.

(d) Dams built recently are not strong enough.

Ans.(b)

65. Multi-purpose projects and large dams have also been the cause of many new environmental movements like_____.

(a) Narmada Bachao Andolan

(b) Save Satluj

(c) Save environment

(d) Green up to cool down

Ans.(a)

66.Who are benefitted from the multi-purpose projects?

(a) Landowners, large farmers and industrialists

(b) Local people

(c) Government

(d) The builders

Ans.(a)

67.Narmada Bachao Andolan or Save Narmada Movement originally focused on-

(a) irrigation strategies

(b) environmental issues related to trees

(c) aim to enable poor citizens, especially the outsees

(d) reservoir planning

Ans.(b)

68. Which is the largest water resource project of India covering four states

(a) Satluj Beas Dam

(b) Bhakra Nangal Dam

(c) Tehri Dam

(d) Sardar Sarovar Dam

Ans.(d)

69. Which states the largest water resource project of India covers?

(a) Punjab, Haryana, Rajasthan and Gujarat

(b) Himachal Pradesh, Haryana. Jharkhand and UP

(c) Maharashtra, Madhya Pradesh, Gujarat and Rajasthan

(d) Assam, West Bengal, Sikkim and Arunachal Pradesh

Ans.(c)

70.Irrigation has also changed the cropping pattern of many regions with farmers shiftingto water intensive and commercial crops. This has great ecological consequences for the soil what is it?

(a) Salinization of soil

(b) Contamination of soil

(c) Pollution of soil

(d) Excess of chemicals

Ans.(a)

71.What reaction did the farmers at Sabarmati-basin farmers have?

(a) Development of agriculture and village economy.

(b) Farmers were agitated and almost caused a riot over the higher priority given to wate supply in urban areas, particularly during droughts.

(c) They were displaced.

(d) They were not rehabilitated.

Ans.(b)

72. In hill and mountainous regions, people-built diversion channels like-

(a) Gullies

(b) Ravines

(c) Tributaries

(d) Guls or kuls

Ans.(d)

73. What was the traditional practice in the flood plains of Bengal, for irrigation?

(a) Canals

(b) Man-made lakes

(c) Inundation channels

(d) Rooftop rainwater

Ans.(c)

74. In the semi-arid and arid regions of Rajasthan, particularly in Bikaner, Phalodi and Barme where was drinking water stored?

(a) Wells

(c) Small village ponds

(b) Underground tanks or Tankas

(d) Rooftop tanks

Ans.(a)

75. In which other places is rooftop rainwater harvesting common other than Rajasthan?

(a) Shillong

(b) Gujarat

(c) West Bengal

(d) Sikkim

Ans.(a)

76.In spite of the fact that today plenty of water is available due to the perennial Indira Gandh Canal in Rajasthan, why do many homes still prefer the Tanka System?

(a) Not enough to reach all homes.

(b) Water is not clean.

(c) Many do not like the taste of tap water.

(d) They feel more secure with the traditional system.

Ans.(c)

77. Which state is the first state in India which has made rooftop rainwater harvesting structure compulsory to all the houses across the state?

(a) West Bengal

(b) Meghalaya

(c) Rajasthan

(d) Tamil Nadu

Ans.(d)

78. In which state is the 200-year-old system by using bamboo pipes still prevalent?

(a) West Bengal

(b) Rajasthan

(c) Meghalaya

(d) Shillong

Ans.(c)

79. In which place in Karnataka the people have installed, in their households's rooftop, rainwater harvesting system to meet their water needs?

(a) Amachawadi in Mysore

(b) Gendathur in Mysore

(c) Chatnahalli in Mysore

(d) Gohali in Mysore

Ans.(b)

80.In Rajasthan what is rainwater referred to as?

(a) Barsaat paani

(b) Baarish paani

(c) Palar pani

(d) Badal Pani

Ans.(c)

81. How is rooftop rainwater filtered?
(a) Using sand and bricks
(b) Using electric filters
(c) Using net system
(d) Using modern filters
Ans.(a)

82. Which of the following is a reason for water scarcity in a region with sufficient water to meet
the requirements of the people?
(a) Huge population
(b) Less rainfall
(c) Power requirement
(d) Pollution
Ans.(d)

83. Which of the following problems arises due to water pollution?
(a) Sedimentation of water bodies
(b) Water-borne diseases
(c) Discharge of industrial water
(d) Spawning of aquatic life
Ans.(b)

84. Which of the following data shows the percentage of global precipitation that is received by India?
(a) 96.5%
(b) 30%
(c) 4%
(d) 2.5%
Ans.(c)

85. Which of the following areas would you immediately associate with water scarcity?
(a) Deserts of Rajasthan
(6) The Ganga plains
(c) Hills of North-eastern India
(d) Coastal areas of Odisha

Ans.(a)

86.Which of the following is one of the largest artificial lakes of ancient India built in the 11th century?

(a) Govind sagar Lake

(6) Hauz Khas

(c) Bhopal Lake

(d) Dal Lake

Ans.(c)

87. Which of the following hydraulic structures is built in river basins?

(a) Lakes

(b) Dams

(c) Tanks

(d) Water harvesting

Ans.(b)

88. Which of the hydraulic structures is not a feature of ancient times?

(a) Multi-purpose river valley projects

(b) Dams built of stone rubble

(c) Reservoirs or lakes

(d) Embankments and canals

Ans.(a)

89. Which of the following structures was constructed by Illtutmish in the 14th century for supplying water to Siri Fort area?

(a) Water harvesting at Sringaverapura near Allahabad

(b) Bhopal Lake

(c) Tank in Haus Khas

(d) Irrigation work at Nagarjunakonda

Ans.(c)

90. In which of the following areas can you find one of the oldest water-harvesting systems of India?

(a) Sringaverapura near Allahabad

(b) Kalinga and Odisha

(c) Bennur and Karnataka

(d) Nagarjunakonda and Andhra Pradesh

Ans.(a)

91. Which of the following state governments have raised the Krishna-Godavari dispute?

(a) Karnataka and Andhra Pradesh

(b) Cujarat and Rajasthan

(c) Maharashtra and Madhya Pradesh

(d) Karnataka and Maharashtra

Ans.(a)

92. On which of the following rivers are the Tilaíya, Panchet, Maithon, Konar and Bokaro dams are located?

(a) Satluj

(b) Damodar

(c) Mahanadi

(d) Krishna

Ans.(b)

93.Which of the following environmental damages are not induced due to multi-purpose projects?

(a) Water-borne diseases and pests

(b) Pollution resulting from exessive use of water

(c) Earthquakes

(d) Volcanic activityy

Ans.(a)

94. Which of the foliowing river projects or groups of river projects provide hydroelectricity to the industries of Maharashtra?

(a) Pravara Project and Koyna Project

(b) Hirakud Project

(c) Nagarjuna sagar Project and Tungabhadra project

(d) Ghataprabha Project and Mettur Projet

Ans.(a)

95. Due to which of the following reasons are rooftop rainwater harvesting commonly practiced particularly in Rajasthan?

(a) To store water for irrigation

(b) To keep house cool

(c) To store drinking water

(d) To clean rooftop

Ans.(c)

96. Which of the following dams are part of Chambal project?
(a) Maithon, Panchet, Tilaiya, Konar, Bokaro
(b) Pravara, Ramagundam
(c) Rana Pratap Sagar, Gandhi Sagar
(d) Sardar Sarovar Dam
Ans.(d)

97. Which of the following is not a method of water harvesting used in Rajasthan?
(a) Johads
(b) Khadins
(c) Guls
(d) Tankas
Ans.(c)

98.On which of the following rivers Tehri Dam is constructed?
(a) Bhagirathi
(b) Yamuna
(c) Kosi
(d) Sutlej
Ans.(a)

99. Salal Dam is built on which river?
(a) Chenab
(b) Mahanadi
(c) Krishna
(d) Satluj
Ans.(a)

100. Oceans contain_____ percent volume of water.
(a) 90 percent
(b) 75 percent
(c) 96.5 percent
(d) 98 percent
Ans.(c)

101. Water is renewable resource because-
(a) it is bcing recycled by human beings.

(b) it is renewed and recharged through hydrological cycle.
(c) it is being renewed through reduction
(d) it can be reused again.
Ans.(b)

102. Nagarjuna sagar Dam is buiit on which river?
(a) Chenab
(b) Mahanadi
(c) Krishna
(d) Satluj
Ans.(c)

103. Which of the following contributes approximately 22 percent of the total electricity produced
in India today?
(a) Solar power
(b) Hydroelectric power
(c) Geothermal energy
(d) Thermal power
Ans.(b)

104. The release of water from dams during heavy rains aggravated the flood situation in Maharashtra and Gujarat in the year_____.
(a) 2005
(b) 2004
(c) 2000
(d) 2006
Ans.(d)

105. How did the multi-purpose projects affect the local people?
(a) Large scale displacement of local communities.
(b) They gained economically.
(c) The government gave them benefits.
(d) They got housing facilities.
Ans.(a)

106. What is the rank of India in the world countries in the terms of water availability per person
per annum?

(a) 129th
(b) 130th
(c) 131st
(d) 133rd
Ans.(d)

107. Ironically, the dams that were constructed to control floods have triggered floods. Which of the following reasons is responsible for it?
(a) Irrigation of surrounding areas
(b) Generation of hydroelectricity
(b) Sedimentation in the reservoir
(d) Pisciculture in the reservoir
Ans.(c)

108. Hauz Khas Tank was built in which present Indian state?
(6) Punjab
(a) Chhattisgarh
(c) Bihar
(d) Delhi
Ans.(d)

109.Which among the following is not the dam based on structure and the material used?
(a) Timber dams
(b) Large dams
(c) Embankment dams
(d) Masonry dams
Ans.(b)

110. The water covered surface of the Earth is
(a) one-fourth
(b) three- fourth
(c) half of the earth
(d) none of these
Ans.(b)

111.The earth is occupied mostly with water yet freshwater resources are only
(a) 3.5%
(b) 5.59%

(c) 2.5%
(d) 0.5%
Ans.(c)

112.The primary source of water is
(a) evaporation
(b) precipitation
(c) rain
(d) none of these
Ans.(c)

113.We need more and more_____for growing food.
(a) land
(b) water
(C) minerals
(d) none of these
Ans.(b)

114. In which one of the following states palar pani is considered the purest form of natural water?
(a) Gujarat
(b) Rajasthan
(c) Madhya Pradesh
(d) Chhatitisgarh
Ans.(b)

115. On which of the following issues did the Narmada Bachao Andolan first focus?
(a) Benefits of irrigation to landless farmers
(b) Environmental issues related to submergence of trees under the dam water
(c) Rehabilitation of the people displaced due to construction of the dam
(d) Economic issues of wastage of money for the construction of the dam
Ans.(b)

116. Which of the following areas were farmers agitation when higher priority was given to water supply in urban areas, particularly during drought?
(a) Krishna- Godavari basin
(b) Konya basin, Maharashtra
(c) Sabarmati basin, Gujarat
(d) Rihand basin, Uttar Pradesh

Ans.(c)

117. In which of the following areas are ‘guls’ and ‘kuls’ used to channel water for agriculture?
(a) Deccan Plateau
(b) Deserts of Rajasthan
(c)Western Himalayas
(d) Ganga Plains
Ans.(c)

118. which among the following regions of India experience low rainfall and is drought prone?
(a) Rajasthan
(b) Gujarat
(c) Bihar
(d) Telagana
Ans.(a)

119. Which of the following remote backward village in Mysore, Karnataka installed household rooftop rainwater harvesting system?
(a) Gendathur
(b) Vanasthalipuram
(c) Chilkunda
(d) Kallahalli
Ans.(a)

120. In which part of India, rooftop rainwater harvesting is the most common practice?
(a) Uttar Pradesh
(b) Kerala
(c) Rajasthan
(d) Shilong
Ans.(d)

PLEASE SHARE THIS

YOU MIGHT ALSO LIKE

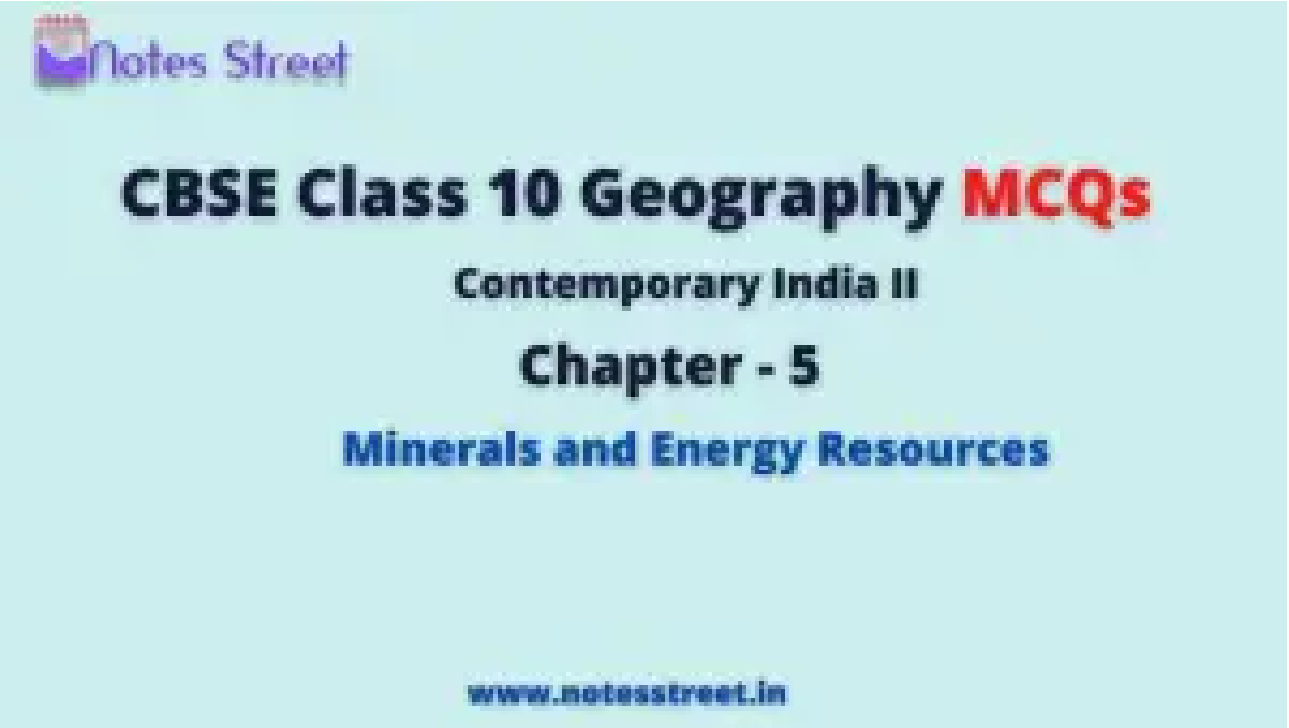

CBSE Class 10 Geography MCQs Chapter – 5 Minerals and Energy Resources

April 21, 2022

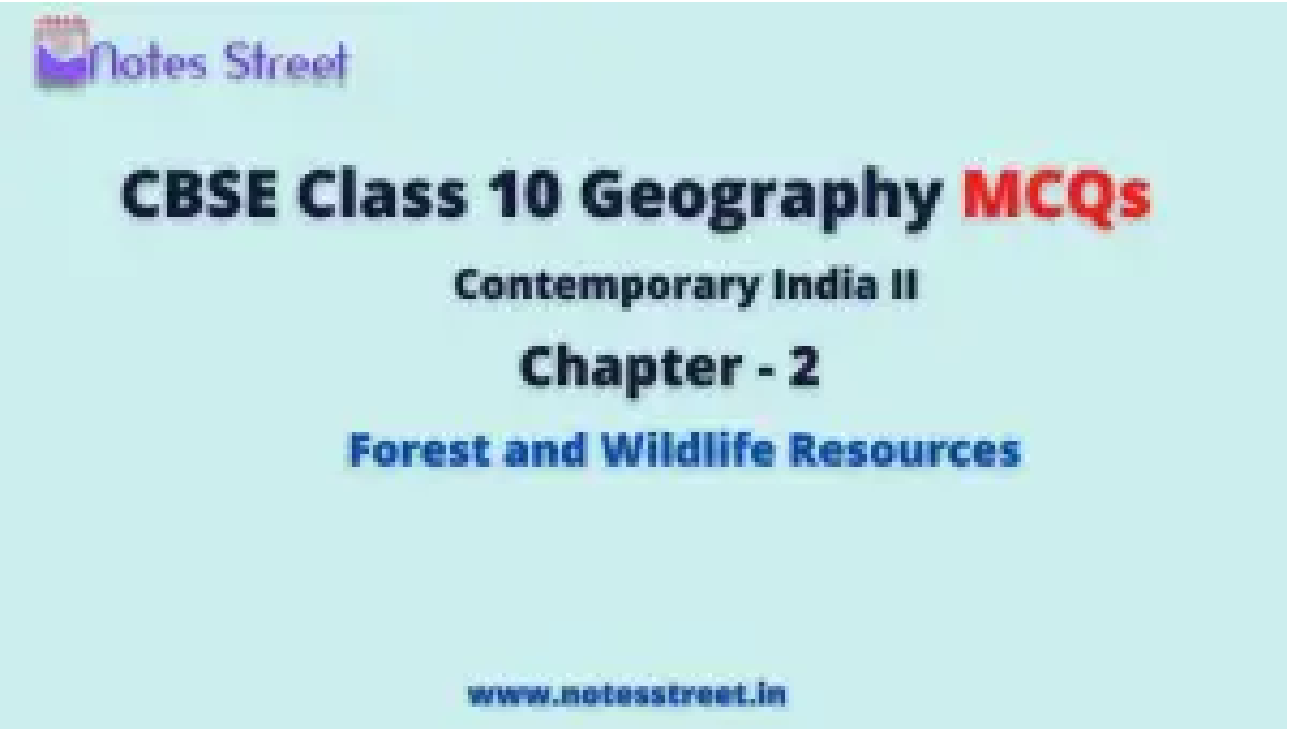

CBSE Class 10 Geography MCQs Chapter – 2 Forest and Wildlife Resources

April 21, 2022

CBSE Class 10 Geography MCQs Chapter – 6 Manufacturing Industries

April 21, 2022