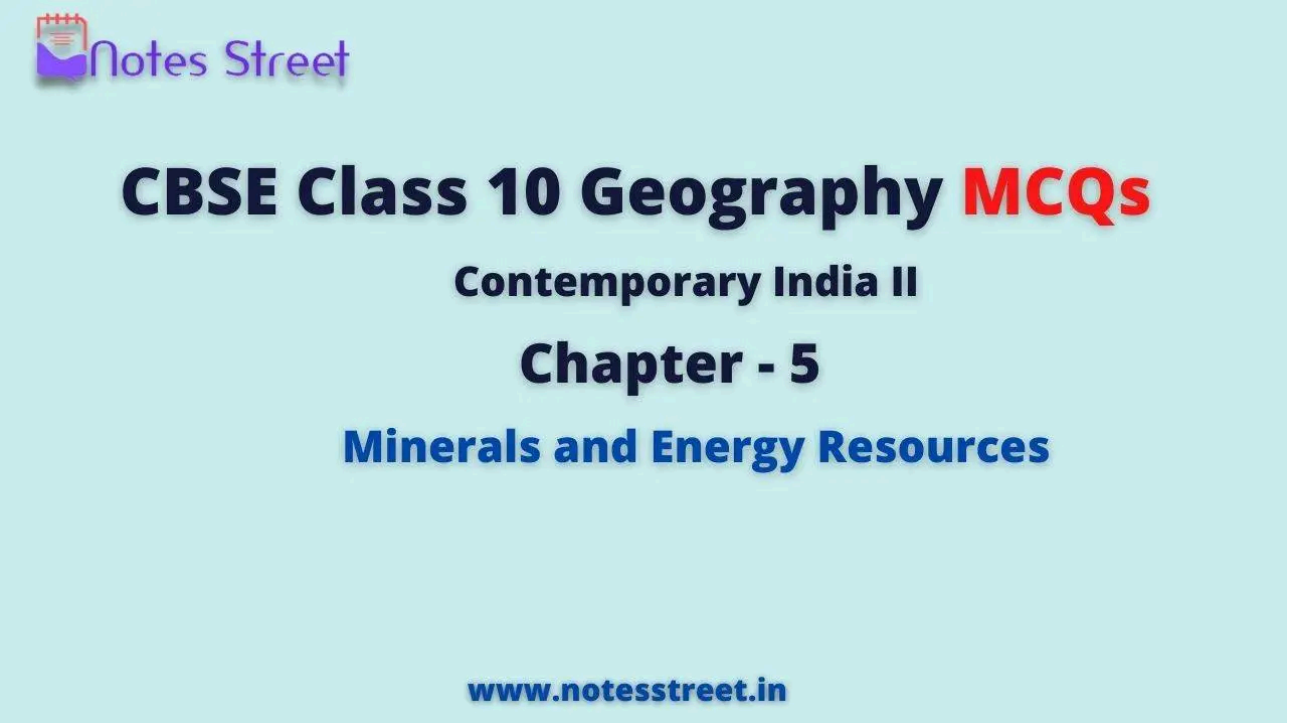

CBSE Class 10 Geography MCQs Chapter – 5 Minerals and Energy Resources

CBSE Class 10 Geography MCQs

Here we are providing **CBSE Class 10 Geography MCQs** Chapter – 5 Minerals and Energy Resources , Chapter MCQs for board exam ,CBSE Class 10 Geography is very important for board exam preparation. This book explains all the concepts and topics in very simple language that the students can easily understand the complex subjects also. This CBSE Class 10 Geography MCQs Chapter – 5 Minerals and Energy Resources, Chapter consist all important topic regarding chapter 2 CBSE Class 10 Geography MCQs Chapter – 5 Minerals and Energy Resources , Chapter . This book basically covers all the major and minor elements that together form a CBSE Class 10 Geography MCQs Chapter – 5 Minerals and Energy Resources . have been discussed in the NCERT Book for Class 10 Geography. The question papers in CBSE board exams are generally based on the latest NCERT books. Hence, students must follow the NCERT book to prepare effectively for their Class 10 Science exam. If you want color notes then **click here**

CBSE Class 10 Geography MCQs Chapter – 5 Minerals and Energy Resources

---

1. Gold, silver and platinum are examples of _____.
(A) Ferrous minerals
(B) Non-ferrous minerals
(C) Precious minerals
(D) Non-metallic minerals
Ans: (C)

2. The Monazite sands in Kerala is rich in
(A) thorium
(B) uranium
(C) platinum
(D) all of the above
Ans:-(A)

3. Which of the following sedimentary minerals is formed as a result of evaporation, especially in arid regions?
(A) Coal
(B) Potash salt
(C) Iron ore
(D) Sulphur
Ans: (B)

4. Cobalt is an example of ____ mineral.
(A) Ferrous minerals
(B) Non-ferrous minerals
(C) Energy minerals
(D) Non-metallic minerals
Ans: (A)

5. Nagarcoil and Jaisalmer are well known for effective use of
(A) solar energy
(B) wind energy

(C) atomic energy

(D) tidal energy

Ans:-(B)

6. Which of the following rocks consists of a single mineral?

(A) Granite

(B) Basalt

(C) Limestone

(D) Sandstone

Ans:-(C)

7. Sandstone and Mica are examples of _____.

(A) Non-metallic minerals

(B) Energy minerals

(C) Non-ferrous minerals

(D) Ferrous minerals

Ans:-(A)

8. The pair of states which has most of the petroleum deposits

(A) Rajasthan and Karnataka

(B) Assam and Gujarat

(C) Gujarat and Maharashtra

(D) Odisha and Goa

Ans:-(B)

9. Minerals are deposited and accumulated in strata of which of the following rocks?

(A) Sedimentary rocks

(B) Metamorphic rocks

(C) Igneous rocks

(D) None of the above

Ans: (A)

10. One of the following is a non-metallic mineral

(A) manganese

(B) copper

(C) coal

(D) granite

Ans:-(D)

11. Coal and Natural Gas are examples of _____ minerals.

(A) Non-metallic

(B) Energy

(C) Ferrous

(D) Non-ferrous

Ans:-(B)

12. Aluminium is obtained from

(A) bauxite

(B) limestone

(C) copper

(D) manganese

Ans:-(A)

13. Study about which of the characteristics of minerals is not a concern of geographers?

(A) Minerals as part of the earth's crust for better understanding of landforms.

(B) Distribution of minerals

(C) Economic activities associated with minerals

(D) Formation, age and physical and chemical composition of minerals

Ans: (D)

14. _____ provides a strong base for the development of metallurgical industries.

(A) Ferrous minerals

(B) Non-ferrous minerals

(C) Energy minerals

(D) Precious minerals

Ans:-(A)

15. Uranium and thorium used for generating nuclear poare found in

(A) Godavari Basin

(B) Gulf of Cambay

(C) Manikarn in Himachal Pradesh

(D) Aravalli ranges of Rajasthan

Ans:-(D)

16. Which of the following is the finest quality of iron ore with magnetic qualities ?

(A) Magnetite

(B) Haematite

(C) Siderite

(D) Limonite

Ans:-(A)

17. Coal mining in Jowai and Cherapunjee is done by family members in the form of a long narrow tunnel, known as _____ mining.

(A) Rathole

(B) Opencast mining

(C) Underground mining

(D) None of the above

Ans:-(A)

18. In which region of India tidal energy is produced?

(A) Gulf of Kuchchh

(B) Puga Valley of Ladakh

(C) Gulf of Cambay

(D) Madhapur near Bhuj

Ans:-(A)

19. Metals like gold, silver and platinum are known as which of the following?

(A) Ferrous minerals

(B) Non-ferrous minerals

(C) Non-metallic minerals

(D) Precious minerals

Ans:-(D)

20. Sedimentary rocks on the western and eastern flanks of the peninsula, in Gujarat and _____ have most of the petroleum deposits.

(A) Madhya Pradesh

(B) Telangana

(C) Assam

(D) Maharashtra

Ans:-(C)

21. Tertiary coals occur in the

(A) North-western states

(B) Coastal states

(C) North-eastern states

(D) Southern states

Ans:-(C)

22. Which of the following regions of India is almost devoid of economic minerals?

(A) The Himalayan belt

(B) The alluvial plains of North India

(C) The Thar desert

(D) The Peninsular plateau

Ans:-(B)

23. Magnetite is the finest iron ore with a very high content of iron up to _____.

(A) 70 percent

(B) 50 percent

(C) 40 percent

(D) 30 percent

Ans:-(A)

24. Mica is used in electric and electronic industries because

(A) of its insulating properties and resistance to high voltage

(B) it is a good conductor of electricity

(C) of its great malleability

(D) of its sonorous nature

Ans:-(A)

25. Which of the following is a major metallic mineral obtained from veins and lodes?

(A) Tin

(B) Iron

(C) Manganese

(D) Gold

Ans:-(A)

26. Durg-Bastar-Chandrapur belt lies in _____ and _____.

(A) Rajasthan and Uttar Pradesh

(B) Chhattisgarh and Maharashtra

(C) Gujarat and Madhya Pradesh

(D) Madhya Pradesh and Odisha

Ans:-(B)

27. Which of the following regions of India contain most of the reserves of coal, metallic minerals, mica and many other non-metallic minerals?

(A) The Himalayas

(B) Alluvial plains of North India

(C) Rock system of peninsula in Rajasthan

(D) Peninsular plateau region

Ans:-(D)

28. Limestone is the basic raw material of

(A) Paper industry

(B) Cement industry

(C) Sugar industry

(D) Textile industry

Ans:-(B)

29. Ballari-Chitradurga-Chikkamagaluru-Tumakuru belt in Karnataka has large reserves of _____.

(A) Iron ore

(B) Copper

(C) Uranium

(D) Granite

Ans:-(A)

30. To which of the following categories of resources, do minerals belong ?

(A) Renewable and replenishable

(B) Flow

(C) Non-renewable and finite

(D) None of the above

Ans:-(C)

31. The larger occurrences of minerals of igneous and metamorphic rocks are called:

(A) Veins

(B) Lodes

(C) Beds

(D) Layers

Ans:-(B)

32. _____ is the largest producer of manganese ores in India.

(A) Jharkhand

(B) Odisha

(C) Madhya Pradesh

(D) West Bengal

Ans:-(B)

33. In which one of the following states the largest wind farm cluster is located?

(A) Gujarat

(B) Kerala

(C) Rajasthan

(D) Tamil Nadu

Ans:-(D)

34. In which of the following locations Mica deposits are not found?

(A) Ajmer

(B) Beawar

(C) Hazaribagh

(D) Katni

Ans:-(D)

35. Which of the following is the oldest oil producing state of India?

(A) Gujarat

(B) Madhya Pradesh

(C) Assam

(D) Andaman Nicobar island

Ans:-(C)

36. Koraput has rich deposits of _____.

(A) Mica

(B) Bauxite
(C) Iron ore
(D) Manganese
Ans:-(B)

37. Which one of the following non- conventional sources of energy is harnessed near Manikarn in Himachal Pradesh?
(A) Geothermal Energy
(B) Wind energy
(C) Solar energy
(D) None of the above
Ans:-(A)

38. Being malleable, ductile and a good conductor, _____ is mainly used in electrical cables, electronics and chemical industries.
(A) Steel
(B) Manganese
(C) Copper
(D) None of the above
Ans:-(C)

39. In which of the following iron ore belt Kudremukh mines are located?
(A) Orissa-Jharkhand belt
(B) Maharashtra-Goa belt
(C) Durg-Baster-Chandrapur belt
(D) Bellary-Chitradiga-Chikmaglur-Tumkur belt
Ans:-(D)

40. India's _____ deposits are mainly found in the Amarkantak plateau, Maikal hills and the plateau region of Bilaspur-Katni.
(A) Bauxite
(B) Iron Ore
(C) Steel
(D) Manganese
Ans:-(A)

41. Which one of the following states, is the largest producer of copper in India ?

(A) Orissa
(B) Karnataka
(C) Madhya Pradesh
(D) Gujarat
Ans:-(C)

42. _____ deposits are found in the northern edge of the Chota Nagpur plateau.
(A) Bauxite
(B) Mica
(C) Copper
(D) Iron Ore
Ans:-(B)

43. Which one of the following is largely derived from ocean water?
(A) Bauxite
(B) Magnesium
(C) Gold
(D) Mica
Ans:-(B)

44. The principal lignite reserves are found in _____, in Tamil Nadu and are used for generation of electricity.
(A) Madurai
(B) Vellore
(C) Neyveli
(D) Tuticorin
Ans:-(C)

45. The highest quality of hard coal is:
(A) Lignite
(B) Bituminous
(C) Peat
(D) Anthracite
Ans:-(D)

46. The _____, Mahanadi, Son and Wardha valleys contain coal deposits.
(A) Sutlej

(B) Narmada
(C) Krishna
(D) Godavari
Ans:-(D)

47. Which form of coal has a low carbon and high moisture contents and low heating capacity?
(A) Peat
(B) Lignite
(C) Anthracite
(D) Bituminous
Ans:-(A)

48. Majority of India's petroleum production is from _____
(A) Mumbai High
(B) Assam
(C) Gujarat
(D) None of the above
Ans:-(A)

49. Which one of the following factors is responsible for the sugar mills to shift and concentrate in the southern and western states of India?
(A) Sugarcane is bulky raw material.
(B) The sucrose content reduces with distance.
(C) The cane produced has higher sucrose content.
(D) The cooperative are not successful.
Ans:-(C)

50. _____ is the oldest oil-producing state of India.
(A) Gujarat
(B) Tamil Nadu
(C) Assam
(D) Maharashtra
Ans:-(C)

PLEASE SHARE THIS

YOU MIGHT ALSO LIKE

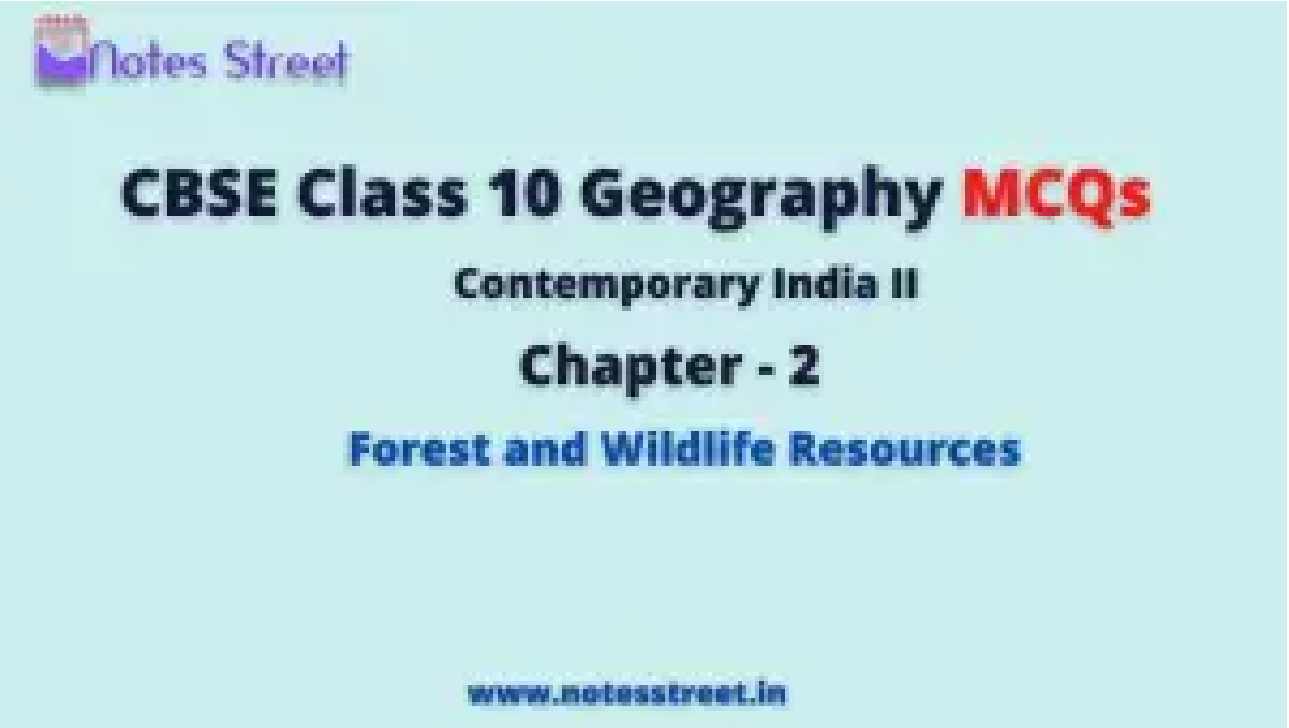

CBSE Class 10 Geography MCQs Chapter – 2 Forest and Wildlife Resources

April 21, 2022

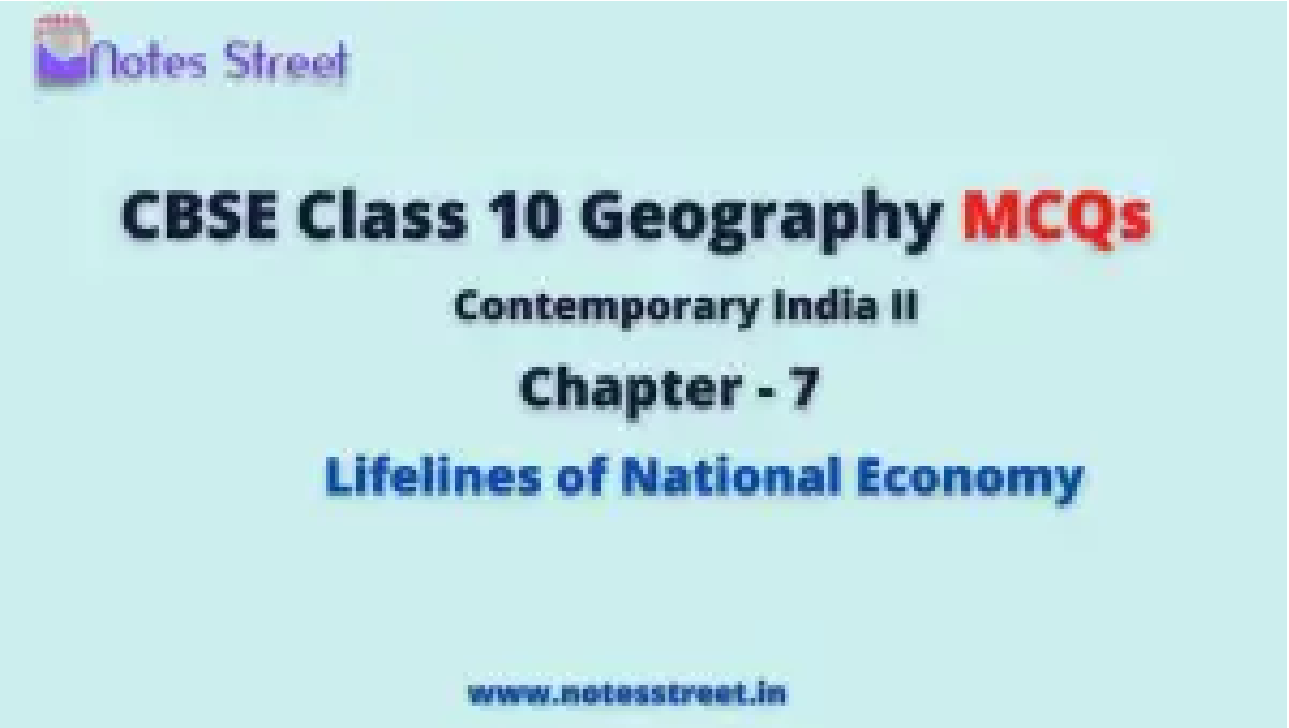

CBSE Class 10 Geography MCQs Chapter – 7 Lifelines of National Economy

April 21, 2022

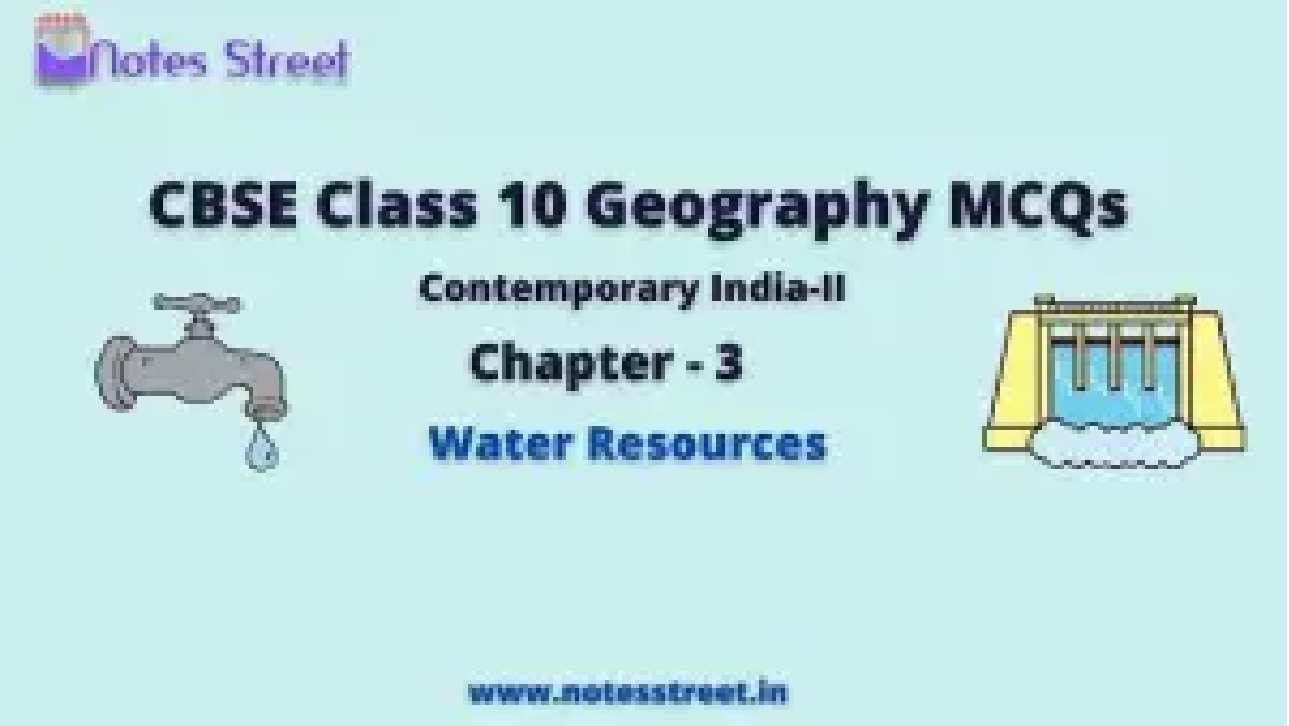

CBSE Class 10 Geography MCQs Chapter – 3 Water Resources

November 2, 2021