CBSE Class 10 Geography MCQs Chapter – 6 Manufacturing Industries

CBSE Class 10 Geography MCQs

Here we are providing **CBSE Class 10 Geography MCQs** Chapter – 6 Manufacturing Industries , Chapter MCQs for board exam ,CBSE Class 10 Geography is very important for board exam preparation. This book explains all the concepts and topics in very simple language that the students can easily understand the complex subjects also. This CBSE Class 10 Geography MCQs Chapter – 6 Manufacturing Industries, Chapter consist all important topic regarding chapter 2 CBSE Class 10 Geography MCQs Chapter – 6 Manufacturing Industries , Chapter . This book basically covers all the major and minor elements that together form a CBSE Class 10 Geography MCQs Chapter – 6 Manufacturing Industries . have been discussed in the NCERT Book for Class 10 Geography. The question papers in CBSE board exams are generally based on the latest NCERT books. Hence, students must follow the NCERT book to prepare effectively for their Class 10 Science exam. If you want color notes then **click here**

CBSE Class 10 Geography MCQs Chapter – 6 Manufacturing Industries

1. Which one of the following has been major source of foreign exchange for IT industry?

(A) Bharat Heavy Electricals Limited (BHEL)

(B) Oil India Limited (OIL)

(C) Steel Authority of India Limited (SAIL)

(D) Business Process Outsourcing (BPO)

Ans:-(D)

2. The processing of raw material into more valuable products falls under the category of

(A) Secondary activities

(B) Tertiary activities

(C) Primary activities

(D) None of the above

Ans:-(a)

3. The contribution of manufacturing to the GDP of some East Asian economies is _____.

(A) 25 to 35 percent

(B) 5 to 10 percent

(C) 5 to 15 percent

(D) Above 50%

Ans:-(A)

4. In what ratio are iron ore, coking coal and limestone required to make steel?

(A) 4 : 2 : 1

(B) 4 : 1 : 2

(C) 4 : 3 : 1

(D) 4 : 3 : 2

Ans:-(A)

5. Which one of the following does not influence industrial location?

(A) Raw material

(B) Capital and po
(C) Market and labour
(D) Underground railway line
Ans: (D)

6. Industrial locations are influenced by availability of _____.
(A) Market
(B) Labour
(C) Raw materials
(D) All of the above
Ans:-(D)

7. The industries that produce goods for direct use by consumers are called
(A) Key industry
(B) Small-scale industry
(C) Consumer industry
(D) Heavy industry
Ans:-(A)

8. Which one of the following groups of factors is a prime group for the location of aluminium smelting plant?
(A) Capital and market
(B) Raw material and electricity
(C) Labour and raw material
(D) Capital and transport
Ans:-(B)

9. On the basis of raw materials used, industries are classified as _____
(A) Public sector and private sector
(B) Basic industries and consumer industries
(C) Agro-based and mineral-based industries
(D) None of the above
Ans:-(C)

10. The first cotton mill of India was set up in
(A) Ahmedabad
(B) Kolkata

(C) Mumbai

(D) Coimbatore

Ans:-(A)

11. Which one of the following is not true regarding the National Jute Policy of 2005?

(A) Creating awareness about the use of biodegradable materials

(B) Ensuring good prices to the jute farmers

(C) Increasing productivity

(D) Improving quality of jute

Ans:-(A)

12. _____ is an example of a private sector industry.

(A) BHEL

(B) TISCO

(C) SAIL

(D) CIL

Ans:-(B)

13. What is per capita consumption of steel per annum in India?

(A) 28 kg

(B) 30 kg

(C) 32 kg

(D) 34 kg

Ans:-(C)

14. _____ are owned and operated by the producers or suppliers of raw materials, workers or both.

(A) Cooperative sector industries

(B) Heavy industries

(C) Light industries

(D) Public sector companies

Ans:-(A)

15. Which of the following factors are not necessary to set up an iron and steel plant?

(A) Proximity to iron-ore mines

(B) Availability of coking coal
(C) Good resources of limestone and manganese
(D) Nearness to a water body to discharge wastes
Ans:-(D)

16. _____ is the only industry in the country, which is self-reliant and complete in the value chain i.e. from raw material to the highest value added products.
(A) Agriculture industry
(B) Textile industry
(C) Light industry
(D) Heavy industry
Ans:-(B)

17. Air pollution is caused by
(A) Organic and inorganic industrial effluents discharged into rivers.
(B) Presence of high proportion of sulphur dioxide, carbon monoxide and air-borne particulate materials.
(C) Unwanted sounds from industries, generators, saws and pneumatic and electric drills.
(D) Overdrawing of groundwater.
Ans:-(B)

18. _____ is the second largest industry in India in terms of employment generation by giving employment to 35 million people.
(A) IT industry
(B) Semiconductor industry
(C) Agriculture industry
(D) Textile industry
Ans:-(D)

19. Most of the integrated steel plants in India are located in
(A) Malwa Plateau
(B) Bundelkhand Plateau
(C) Meghalaya Plateau
(D) Chotanagpur Plateau
Ans:-(D)

20. The contribution of the textile industry to India's GDP is _____.

(A) 20%

(B) 15%

(C) 4%

(D) 10%

Ans:-(C)

21. Which are the two prime factors for the location of aluminium industry?

(A) Market and labour

(B) Transport network and water supply

(C) Cheap and regular supply of electricity and bauxite

(D) None of the above

Ans:-(C)

22. The first successful textile mill was established in _____ in 1854.

(A) Bombay

(B) Calcutta

(C) Surat

(D) Madras

Ans:-(A)

23. The first cement plant was set up in India in 1904 in

(A) Jamshedpur

(B) Hyderabad

(C) Nagpur

(D) Chennai

Ans:-(D)

24. In the early years, the cotton textile industry was concentrated in the cotton growing belt of _____ and _____.

(A) Karnataka and Andhra Pradesh

(B) Maharashtra and Karnataka

(C) Maharashtra and Gujarat

(D) Gujarat and Rajasthan

Ans:-(C)

25. Which one of the following groups of states have the largest number of cotton textile centres?

(A) Gujarat and Maharashtra

(B) Karnataka and Tamil Nadu

(C) Maharashtra and Madhya Pradesh

(D) Uttar Pradesh and Gujarat

Ans:-(A)

26. Which of the following is not a centre of silk industries?

(A) Mysore

(B) Varanasi

(C) Bankura

(D) Aurangabad

Ans:-(D)

27. Which of the following group of factors is a prime group for the location of aluminium smelting plant?

(A) Capital and Market

(B) Raw material and Electricity

(C) Labour and Raw material

(D) Capital and Transport

Ans: (B)

28. Which of the following is a centre for Woollen textiles?

(A) Indore

(B) Porbandar

(C) Ujjain

(D) Bikaner

Ans:-(D)

29. Which one of the following countries has the largest installed capacity of spindles in the world?

(A) India

(B) China

(C) USA

(D) Britain

Ans: (B)

30. Which of the following is a centre for Cotton textiles?

(A) Jalgaon

(B) Kolar

(C) Jaipur

(D) Ludhiana

Ans:-(A)

31. Which one of the following cities is known as electronic capital of India ?

(A) Srinagar

(B) Noida

(C) Bengaluru

(D) Pune

Ans:-(C)

32. India has the second largest installed capacity of spindles in the world, after _____.

(A) China

(B) USA

(C) United Kingdom

(D) Russia

Ans:-(A)

33. The first successful textile mill was established in:

(A) Delhi

(B) Vishakhapatnam

(C) Chennai

(D) Mumbai (Bombay)

Ans:-(D)

34. India has a large share in the world trade of cotton yarn, accounting for _____ of the total trade.

(A) 25%

(B) 50%

(C) 90%

(D) 70%

Ans:-(A)

35. Manufacturing Industries are placed in:

(A) Primary sector

(B) Secondary sector

(C) Tertiary sector

(D) Service sector

Ans: (B)

36. The first jute mill was set up in 1859 at Rishra, located near _____.

(A) Mumbai

(B) Chennai

(C) Kolkata

(D) Surat

Ans:-(C)

37. Which one of the following air services provides services to Oil and Natural Gas Commission in its off-shore operations?

(A) Indian Airlines

(B) Air India

(C) Pawan hans Helicopters LTD

(D) Alliance

Ans:-(C)

38. India is the largest producer of raw jute and jute goods and stands at second place as an exporter after _____.

(A) China

(B) Bangladesh

(C) Japan

(D) United Kingdom

Ans:-(B)

39. The first successful textile mill was established in:

(A) Delhi

(B) Vishakhapatnam

(C) Chennai

(D) Mumbai (Bombay)

Ans:-(D)

40. National Jute Policy was formulated in _____ with the objective of increasing productivity, improving quality, ensuring good prices to the jute farmers and enhancing the yield per hectare.

(A) 2004

(B) 2010

(C) 2005

(D) 2015

Ans:-(C)

41. What is the correct meaning of agglomeration economies?

(A) Many industries set up in rural centres

(B) Industries are basically agro-based.

(C) Many industries tend to come together to make use of the advantages offered by the urban centres

(D) Industries set up produce raw material for secondary sector.

Ans:-(C)

42. Sixty percent of sugar mills in India are located in _____ and _____.

(A) Uttar Pradesh and Bihar

(B) Bihar and West Bengal

(C) Karnataka and Uttar Pradesh

(D) Karnataka and Madhya Pradesh

Ans:-(A)

43. Which of the following industries has been a major foreign exchange earner in the last few years?

(A) Electronics Industry

(B) Information Technology Industry

(C) Engineering Industry

(D) Tourism Industry

Ans:-(B)

44. India is ranked _____ among the world's crude steel producers.

(A) 4th

(B) 1st

(C) 2nd

(D) 3rd

Ans:-(A)

45. Which of the following is an electronics industry?

(A) HMT, Bengaluru

(B) TISCO, Jamshedpur

(C) BHEL, Hyderabad

(D) BALCO, Korba

Ans:-(C)

46. The Steel plant located in coastal area is at :

(A) Masulipatnam

(B) Vishakhapatnam

(C) Nagapatnam

(D) Thiruvanthapuram.

Ans:-(B)

47. Which of the following is a negative effect of industrialisation?

(A) Economic growth

(B) Pollution

(C) Foreign exchange earnings

(D) Rapid urbanisation

Ans:-(B)

48. Which one of the following agencies markets steel for the public sector plants ?

(A) HAIL

(B) SAIL

(C) Tata Steel

(D) MNCC.

Ans:-(B)

49. Which of the following industries is the largest consumer of chemicals?

(A) Fertilisers

(B) Textiles

(C) Chemicals

(D) Paper

Ans:-(C)

50. In which one of the following states are 60 per cent of India's steel units located ?

(A) Karnataka and Tamil Nadu

(B) Uttarakhand and Bihar

(B) Punjab and Haryana

(D) Jharkhand and Odisha.

Ans:-(D)

51. Sixty percent of sugar mills are concentrated in which of the following states?

(A) Punjab and Haryana

(B) Maharashtra and Gujarat

(C) Uttar Pradesh and Bihar

(D) West Bengal and Orissa

Ans:-(C)

52. Which of the following industries uses bauxite as a raw material ?(NCERT)

(A) Aluminium

(B) Cement

(C) Jute

(D) Steel.

Ans:-(A)

53. When and where was the first successful textile mill established in India?

(A) In Ahmedabad in 1858

(B) In Chennai in 1954

(C) In Kolkata in 1816

(D) In Mumbai in 1854

Ans:-(D)

54. Which one of the following industries manufactures telephones, computers, etc. ?

(A) Steel

(B) Aluminium

(C) Electronic

(D) Information Technology.

Ans:-(c)

PLEASE SHARE THIS

YOU MIGHT ALSO LIKE

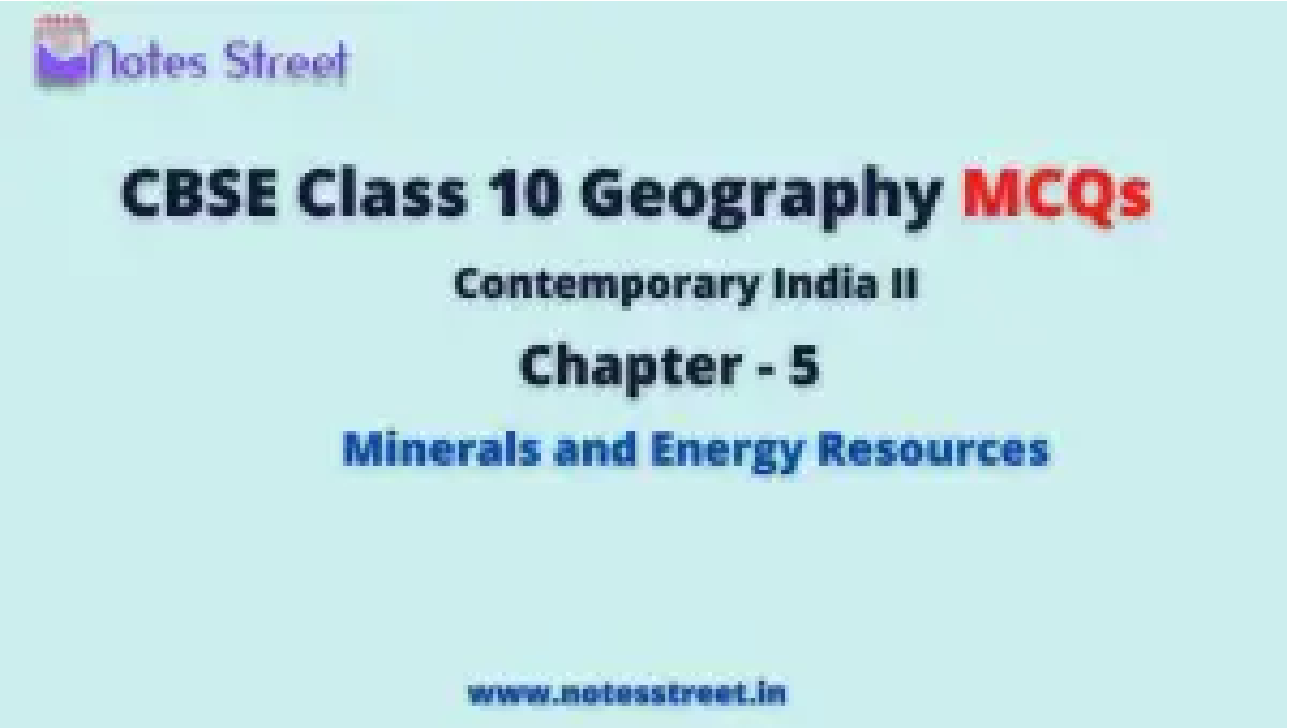

CBSE Class 10 Geography MCQs Chapter – 5 Minerals and Energy Resources

April 21, 2022

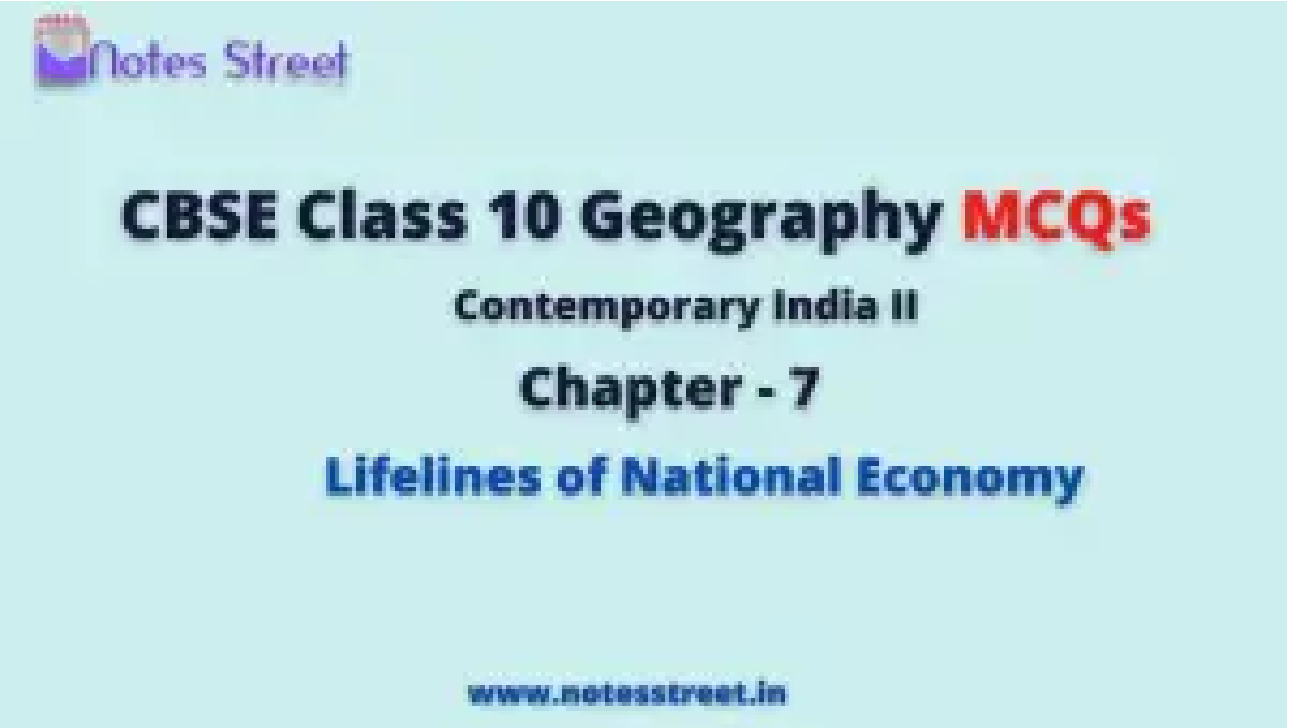

CBSE Class 10 Geography MCQs Chapter – 7 Lifelines of National Economy

April 21, 2022

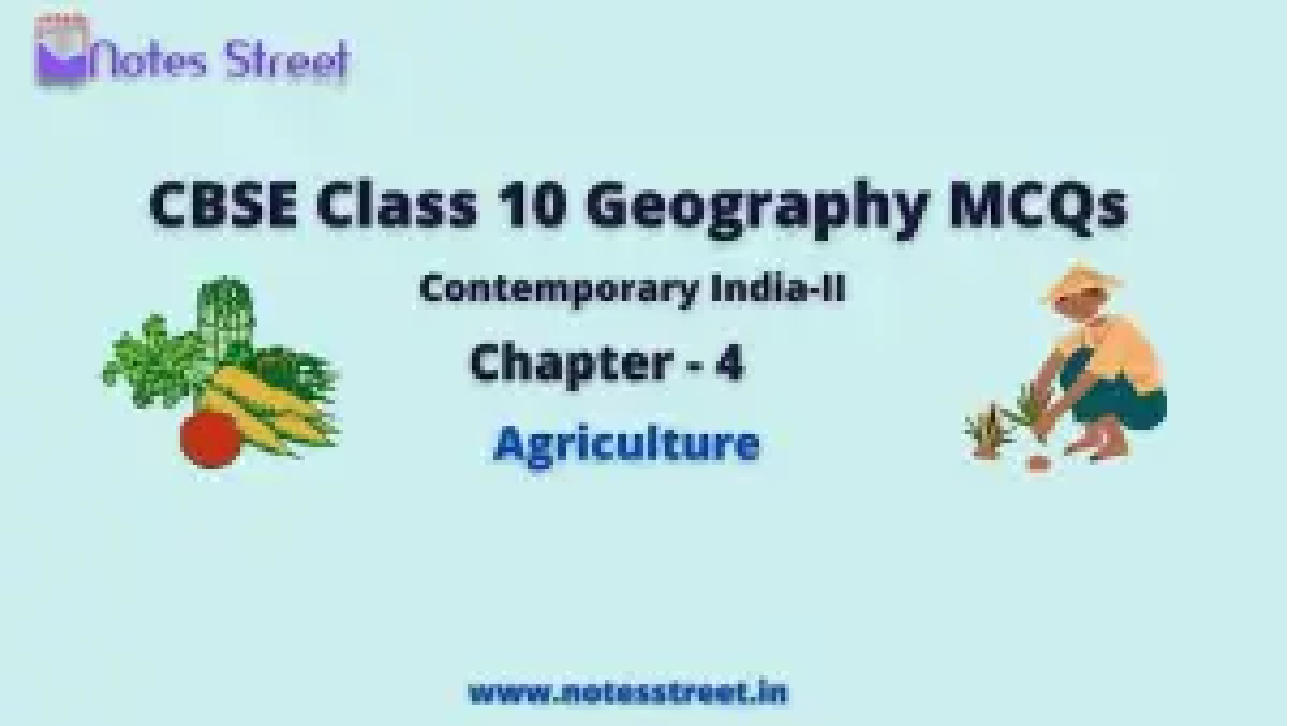

CBSE Class 10 Geography MCQs Chapter – 4 Agriculture

November 3, 2021