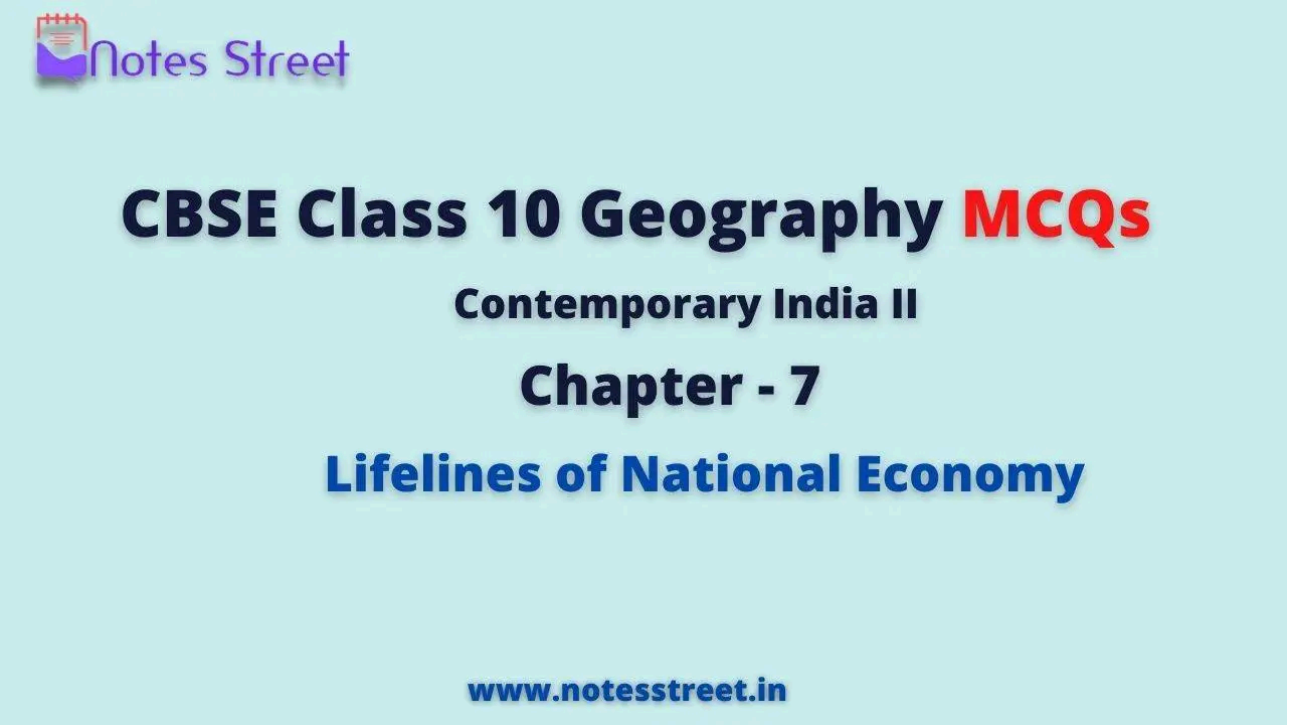

CBSE Class 10 Geography MCQs Chapter – 7 Lifelines of National Economy

CBSE Class 10 Geography MCQs

Here we are providing **CBSE Class 10 Geography MCQs** Chapter – 7 Lifelines of National Economy , Chapter MCQs for board exam ,CBSE Class 10 Geography is very important for board exam preparation. This book explains all the concepts and topics in very simple language that the students can easily understand the complex subjects also. This CBSE Class 10 Geography MCQs Chapter – 7 Lifelines of National Economy, Chapter consist all important topic regarding chapter 2 CBSE Class 10 Geography MCQs Chapter – 7 Lifelines of National Economy , Chapter . This book basically covers all the major and minor elements that together form a CBSE Class 10 Geography MCQs Chapter – 7 Lifelines of National Economy . have been discussed in the NCERT Book for Class 10 Geography. The question papers in CBSE board exams are generally based on the latest NCERT books. Hence, students must follow the NCERT book to prepare effectively for their Class 10 Science exam. If you want color notes then **click here**

CBSE Class 10 Geography MCQs Chapter – 7 Lifelines of National Economy

1. East-West Corridor connecting Silcher in _____ and Porbander in Gujarat are part of the Golden Quadrilateral Highways.

(a) Assam

(b) Arunachal Pradesh

(c) Manipur

(d) Sikkim

Ans – (a)

2. Which of the following types of roads received special impetus under the Pradhan Mantri Grameen Sadak Yojana?

(a) National Highways

(b) State Highways

(c) Rural Roads

(d) District Roads

Ans – (c)

3. The major objective of these Super Highways is to reduce the time and distance between the megacities of India. These highway projects are being implemented by the _____.

(a) National Highway Authority of India (NHAI)

(b) State Highway Authority of India

(c) Public Works Department

(d) All of the above

Ans – (a)

3. Which of the following modes of transport would you find in higherareas of mountainous regions like the Himalayas?

(a) Railways

(b) Roadways

(c) Inland waterways

(d) Airways

Ans – (b)

4. The historical Sher-Shah Suri Marg is called National Highway No.1, between Delhi and _____.

(a) Jalandhar

(b) Chandigarh

(c) Ludhiana

(d) Amritsar

Ans – (d)

5. The means for the movement of goodsand services from their supply locations to demand locations can be termed as which of the following?

(a) Capital

(b) Traders

(c) Transport system

(d) Power supply

Ans – (a)

6. Roads linking a state capital with different district headquarters are known as _____.

(a) National Highways

(b) State Highways

(c) Expressways

(d) Super Highways

Ans – (b)

7. When and between which two stations did the first train of India steam off?

(a) Kolkata to Raniganj, 1874

(b) Mumbai to Thane, 1853

(c) Mumbai to Ahmedabad, 1854

(d) Chennai to Arkonam, 1856

Ans – (b)

8. District Roads connect the district headquarters with other places of the district. These roads are maintained by the _____.

(a) Zila Parishad

(b) State Government

(c) Central Government

(d) Village Panchayat

Ans – (a)

9. India has one of the largest networks of which of the following modes of transport?

(a) Roadways

(b) Railways

(c) Waterways

(d) Pipelines

Ans – (a)

10. _____ is a Government of India undertaking which constructs and maintains roads in the bordering areas of the country.

(a) Public Works Department

(b) Border Roads Organisation

(c) National Highway Authority of India

(d) None of the above

Ans – (b)

11. Which of the following are the primary road systems of our country?

(a) National Highways

(b) State Highways

(c) District roads

(d) Border roads

Ans – (a)

12. Petroleum and Petroleum products constitute _____ of the total commodities imported to India.

(a) 5.2 percent

(b) 9.4 percent

(c) 2.7 percent

(d) 28.6 percent

Ans – (d)

13. Which of the following is the busiest railway junction in Northern India?

(a) Ambala

(b) New Delhi

(c) Lucknow

(d) Amritsar

Ans – (b)

14. Border Roads Organisation (BRO) was established in ____ for the development of the roads of strategic importance in the northern and north eastern border areas.

(a) 1965

(b) 1955

(c) 1960

(d) 1970

Ans – (c)

15. The National Highway No.1 is also known by which of the following names?

(a) Mahatma Gandhi Road

(b) Sher Shah Suri Marg

(c) Red Road

(d) Chhatrapati Shivaji Terminus

Ans – (b)

16. The length of road per _____ of area is known as the density of roads.

(a) 100 sq. km

(b) 300 sq. km

(c) 200 sq. k

(d) 500 sq. km

Ans – (a)

17. In which region air travel is extended to the common people through a special provision?

(a) Northern States

(b) North – western States

(c) North – Eastern States

(d) South – Western States

Ans – (c)

18. Density of all roads varies from only 12.14 km in Jammu and Kashmir to 517.77 km in _____, as on 31st March 2011.

(a) Andhra Pradesh

(b) Karnataka

(c) Maharashtra

(d) Kerala

Ans – (d)

19. BRO stand for

(a) Broader Roads Organisations

(b) Border Region Organisation

(c) Border Religion Organisation

(d) None of the above.

Answer: (a)

20. _____ is the largest public sector undertaking in India.

(a) National Highways Authority of India (NHAI)

(b) Steel Authority of India Limited (SAIL)

(c) National Thermal Power Corporation (NTPC)

(d) Indian Railways

Ans – (d)

21. Which port is the biggest one in India ?

(a) Mumbai

(b) Kandla

(c) Paradip

(d) Haldia.

Answer: (a)

22. The first train in India steamed off from _____ to _____ in 1853, covering a distance of 34 km.

(a) Mumbai to Thane

(b) Mumbai to Surat

(c) Delhi to Lucknow

(d) Delhi to Mumbai

Ans – (a)

23. Air transport was nationalised in

(a) 1963

(b) 1953

(c) 1960

(d) 1973.

Ans – (b)

24. The Indian Railway network runs on multiple gauge operations, _____ has the maximum total track in kilometres.

(a) Broad Gauge

(b) Metre Gauge

(c) Narrow Gauge

(d) None of the above

Ans – (a)

25. Which state is not connected by HVJ pipeline ?

(a) Uttar Pradesh

(b) Madhya Pradesh

(c) Gujarat

(d) Rajasthan.

Ans – (d)

26. From Salaya in Gujarat to _____ in Punjab, via Viramgam, Mathura, Delhi and Sonipat is one of the three important networks of pipeline transportation in the country.

(a) Jalandhar

(b) Ludhiana

(c) Chandigarh

(d) Amritsar

Ans – (a)

27. Which one of the following groups of terminal stations is connected with National Highway No. 8 ?

(a) Delhi and Kolkata

(b) Delhi and Amritsar

(c) Delhi and Mumbai

(d) Varanasi and Kanyakumari.

Ans – (c)

28. From _____ in Gujarat to Jagdishpur in Uttar Pradesh, via Vijaipur in Madhya Pradesh is one of the three important networks of pipeline transportation in the

country.

(a) Surat

(b) Ahmedabad

(c) Hazira

(d) Porbandar

Ans – (c)

29. Which one of the following ports is the premier iron-ore exporting port of the country?

(a) New Mangalore Port

(b) Marmagao Port

(c) Vishakhapatnam Port

(d) Paradip Port.

Ans – (b)

30. National Waterway No.2 is between Sadiya and _____.

(a) Dhubri

(b) Udyogamandal

(c) Haldia

(d) Champakkara

Ans – (a)

31. Which one of the following means of transport is used for carrying solids in a slurry form ?

(a) Trucks

(b) Railways

(c) Pipelines

(d) Ships.

Ans – (c)

32. 95 percent of India's trade in volume and 68 percent of India's trade in terms of value is moved by _____.

(a) Railways

(b) Sea

(c) Roadways

(d) Airways

Ans – (b)

33. Which one of the following ports was developed as a subsidiary port, in order to relieve the growing pressure on the Kolkata port ?

(a) Haldia

(b) Tuticorin

(c) Ennore

(d) Jawaharlal Nehru Port.

Ans – (a)

34. _____ port was the first port developed soon after Independence to ease the volume of trade on the Mumbai port, in the wake of the loss of Karachi port to Pakistan after the Partition.

(a) Surat

(b) Porbandar

(c) Okha

(d) Kandla

Ans – (d)

35. _____ is the premier iron ore exporting port of India.

(a) Marmagao port

(b) Mumbai port

(c) Mangalore port

(d) Chennai port

Ans – (a)

36. The first class mail includes which one of the following ?

(a) Book packets

(b) Registered newspapers

(c) Envelopes and cards

(d) Periodicals and journals.

Ans – (c)

37. _____ port is the deepest landlocked and well-protected port of India.

(a) Vishakhapatnam

(b) Kochi

(c) Tuticorin

(d) Paradip

Ans – (a)

38. Which one of the following groups of cities is connected by the National Highway No. 1?

(a) Kolkata-Amritsar

(b) Ranchi-Kolkata

(c) Delhi-Punjab

(d) Varanasi-Kanyakumari

Ans – (c)

39. Which of the following was the first port to be developed soon after Independence?

(a) Mumbai

(b) Kolkata

(c) Paradip

(d) Kandla

Ans – (d)

40. National Waterway No. 1 is navigable between which of the following places?

(a) Sadiya and Dhubri

(b) Allahabad and Haldia

(c) Udyogamandal and Champakkara

(d) Kottapuram and Komman

Ans – (b)

41. Which of the following is the headquarter for the South-Eastern Railway and Eastern Railway Zones?

(a) Kolkata

(b) Kharagpur

(c) Bhubaneshwar

(d) Mumbai

Ans – (a)

42. Which one of the following ports is the biggest with a spacious natural and well-sheltered harbour?

(a) Kolkata

(b) Chennai

(c) Mumbai

(d) Vishakhapatnam

Ans – (c)

43. Which one of the following types of communication service in India is the largest in the world?

(a) Postal network

(b) Television network

(c) Internet services

(d) Radio broadcasting

Ans – (a)

44. Which one of the following is the oldest artificial port of the country?

(a) Tuticorin

(b) Vishakhapatnam

(c) Chennai

(d) Mumbai

Ans – (c)

45. Which of the following modes of transport is fuel efficient and environment friendly?

(a) Roadways

(b) Railways

(c) Airways

(d) Waterways

Ans – (d)

46. Which one of the following in an Inland riverine port ?

(a) Kandla

(b) Kolkata

(c) Mumbai

(d) Tuticorin

Ans – (b)

PLEASE SHARE THIS

YOU MIGHT ALSO LIKE

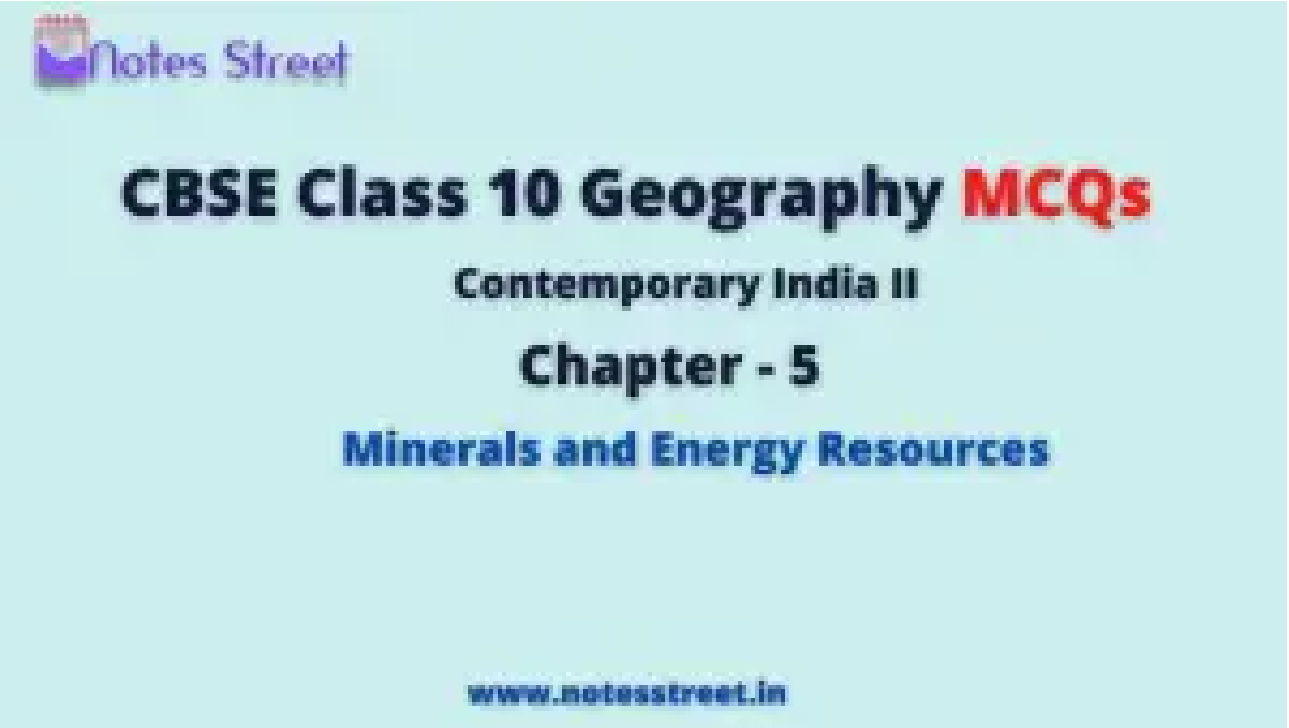

CBSE Class 10 Geography MCQs Chapter – 5 Minerals and Energy Resources

April 21, 2022

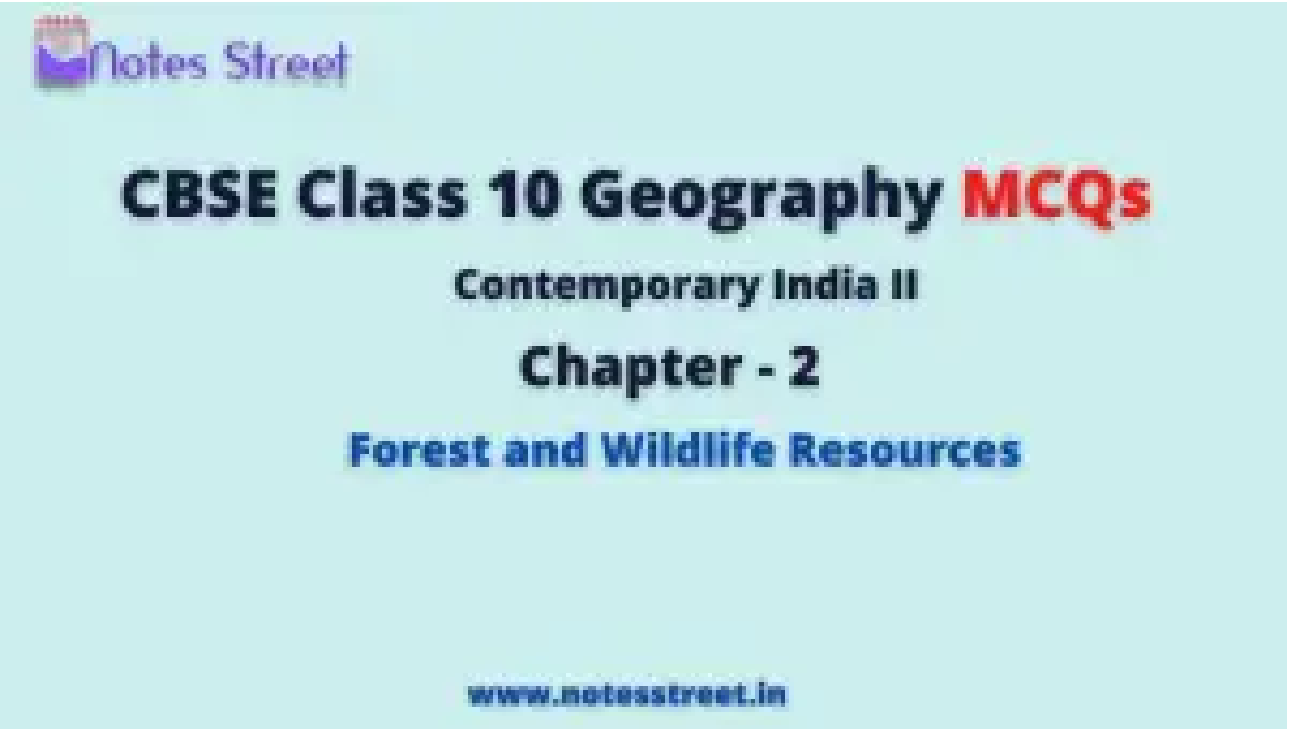

CBSE Class 10 Geography MCQs Chapter – 2 Forest and Wildlife Resources

April 21, 2022

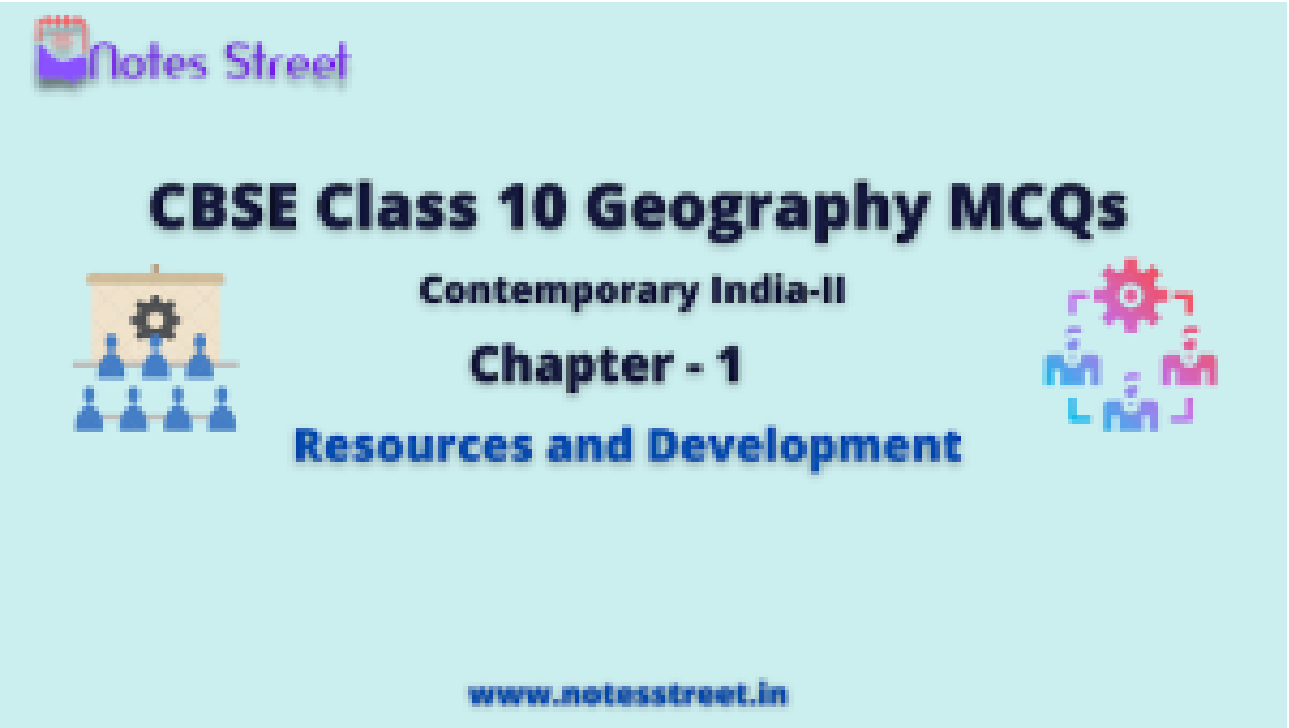

CBSE Class 10 Geography MCQs Chapter – 1 Resources and Development

November 1, 2021